New York City Yellow Taxi

Exploratory Data Analysis

NYC YELLOW TAXI — 2023 — ANNUAL OPERATIONS REPORT

Pandas | NumPy | Matplotlib | Seaborn | GeoPandas

Temporal Analysis • Financial Analysis • Geographical Analysis

Operational Efficiency • Pricing Strategy • Customer Experience

NYC Taxi & Limousine Commission (TLC) | Data via Technology Providers & Hailing Apps

SECTION 1

Data Preparation & Loading

The dataset consists of **12 monthly Parquet files** (January–December 2023) from the NYC Taxi & Limousine Commission. Each file contains millions of yellow taxi trip records. To ensure computational feasibility, an **8% stratified sample** was drawn — sampling across each hour of every date in every month — preserving temporal distributions. Sampled data was saved as a single CSV for downstream analysis.

Source	Format	Files	Sample Size	Final Rows
NYC TLC Open Data	Parquet (.parquet)	12 monthly files	8% stratified hourly	~300,000 rows

Key Dataset Columns

Field	Type	Description
VendorID	Categorical	Technology provider (1=Creative Mobile Tech, 2=VeriFone)
tpep_pickup_datetime	DateTime	Pickup timestamp
tpep_dropoff_datetime	DateTime	Dropoff timestamp
passenger_count	Numeric	Driver-reported passenger count (1–6)
trip_distance	Numeric	Trip distance in miles
PULocationID / DOLocationID	Categorical	TLC taxi zone IDs (1–265)
payment_type	Categorical	1=Credit Card, 2=Cash, 3=No Charge, 4=Dispute
fare_amount / tip_amount	Numeric	Metered fare and tip in USD
total_amount	Numeric	Total charged including surcharges
congestion_surcharge / airport_fee	Numeric	Zone-specific surcharges

SECTION 2

Data Cleaning

Systematic cleaning was applied across five categories: column fixes, missing value imputation, negative value correction, duplicate removal, and outlier handling.

Issue	Column(s)	Action	Rationale
Duplicate airport fee cols	airport_fee / Airport_fee	Combined via max(); renamed	Vendor naming inconsistency in source data
Negative monetary values	mta_tax, surcharge, total_amount	Replaced with column median	Negative charges are physically impossible
Missing passenger_count	passenger_count	Imputed with mode (=1)	Single-passenger trips are the dominant pattern

Missing RatecodeID	ratecodeid	Imputed with mode	Categorical field; mode is most representative
Missing congestion/airport fee	congestion_surcharge, airport_fee	Filled with 0	Missing = surcharge not applicable for that trip
Passenger count > 6	passenger_count	Dropped rows	NYC TLC max capacity is 6 passengers
Trip distance > 250 miles	trip_distance	Dropped rows	Unrealistic for NYC taxi; likely GPS error
Zero distance + high fare	trip_distance, fare_amount	Dropped rows	Contradictory values indicate data entry error
Total amount > $500	total_amount	Dropped rows	Extreme outliers skew revenue analysis
Tip % > 30%	tip_pct	Dropped rows	Unrealistic gratuity; likely data error
payment_type = 0	payment_type	Dropped rows	Valid codes are 1–6 per TLC data dictionary

SECTION 3.1

Temporal Analysis

Taxi pickups were analysed across three time dimensions — hourly, daily, and monthly — to identify demand patterns that can drive fleet deployment and driver scheduling decisions.

3.1.1 — Hourly Pickup Trends

Visualisation: Line chart | Analysis type: Temporal Univariate

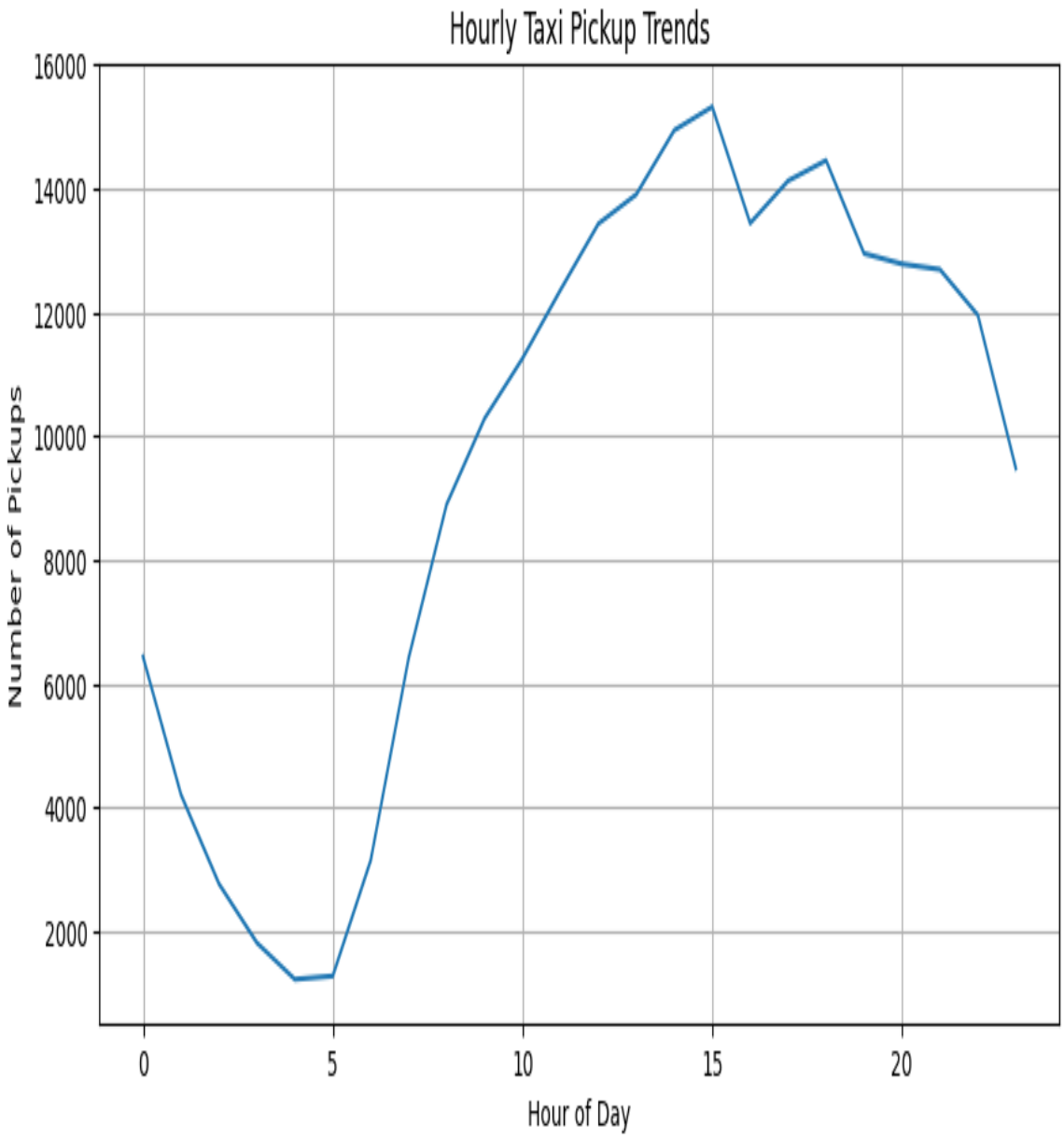

Fig 3.1.1 — Hourly Taxi Pickup Trends

Result	Demand is lowest during early morning (3–5 AM). Rises sharply from 6 AM through a morning commute peak. Reaches maximum around 3–6 PM (evening commute). Drops after 9 PM.
Insight	Two clear commute-driven peaks dominate the day. The evening peak is stronger than morning, likely due to leisure travel combining with commuters.

Outcome	Schedule maximum fleet deployment between 6–9 AM and 3–7 PM. Reduce idle cabs during 2–5 AM to cut operational costs.

3.1.2 — Daily Pickup Trends (Day of Week)

Visualisation: Line chart with markers | Analysis type: Segmented Temporal

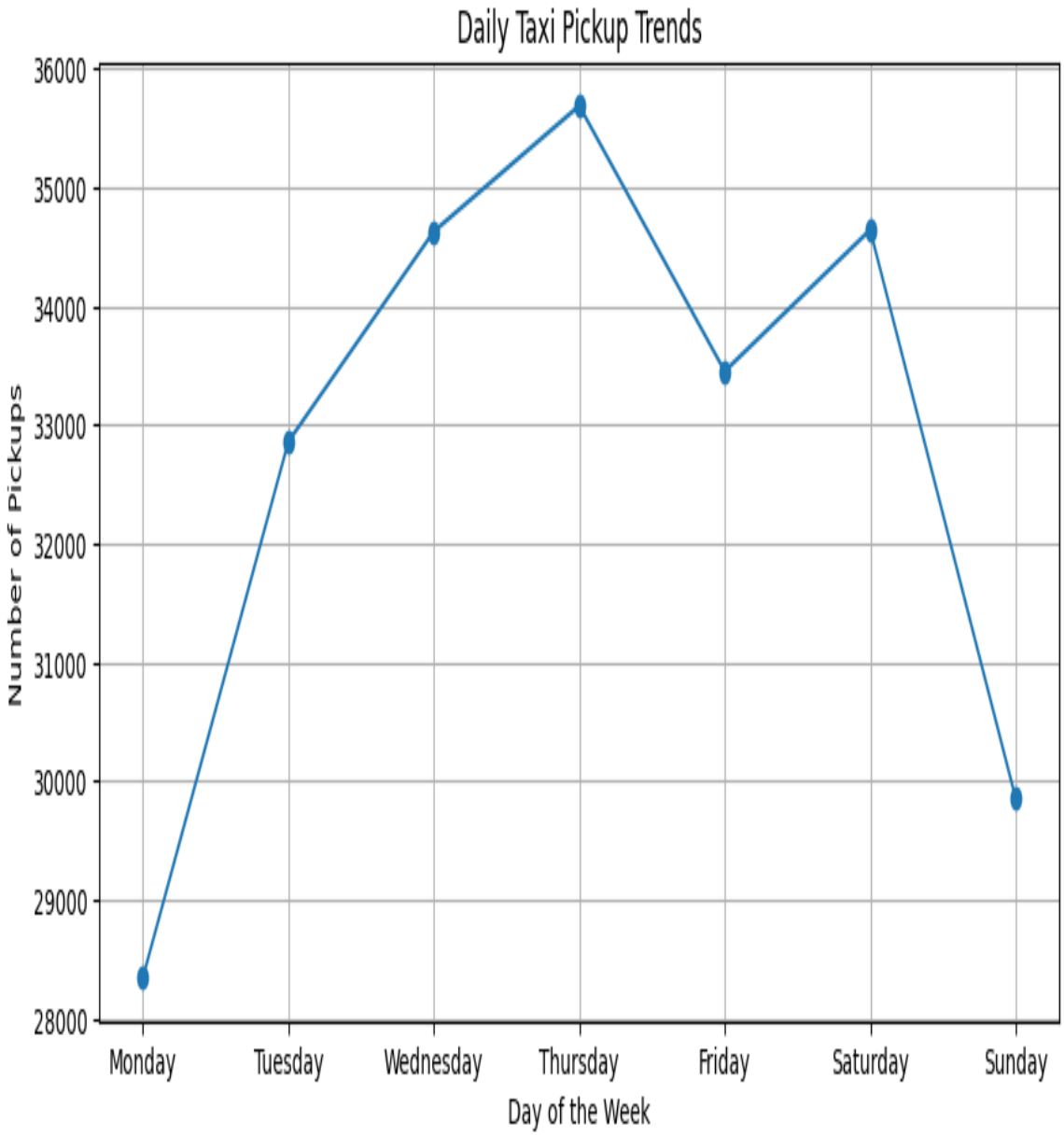

Fig 3.1.2 — Daily Taxi Pickup Trends

Result	Thursday–Friday show the highest trip volumes. Monday and Sunday are lowest. Mid-week is consistently active.
Insight	Weekday demand driven by commuting patterns. Thursday–Friday peaks likely include restaurant and nightlife trips. Sunday lows reflect reduced business activity.
Outcome	Prioritise full fleet on Thursday–Friday. Consider reduced base staffing on Sunday mornings.

3.1.3 — Monthly Pickup Trends

Visualisation: Line chart with markers | Analysis type: Seasonal Temporal

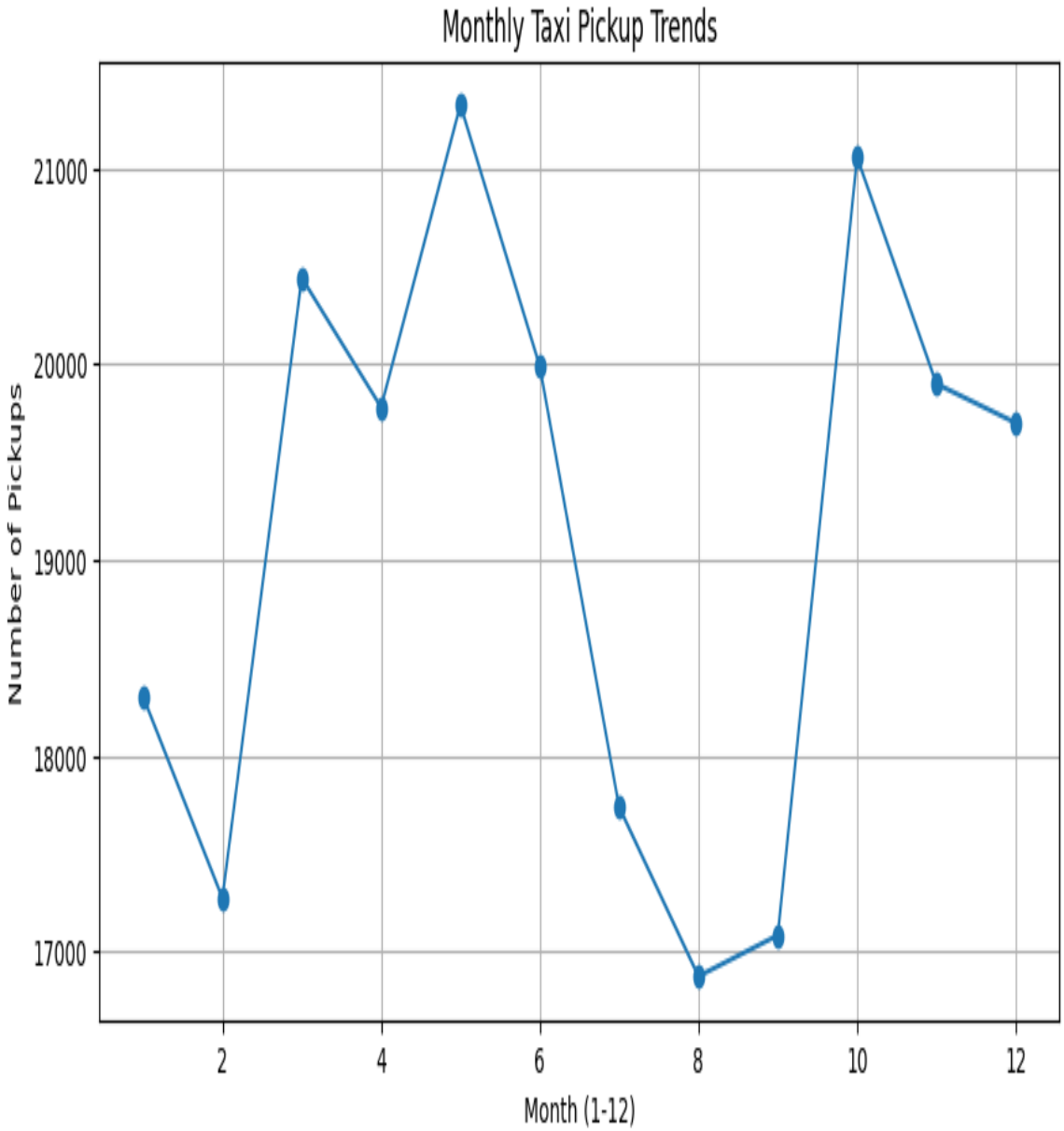

Fig 3.1.3 — Monthly Taxi Pickup Trends

Result	Pickup volumes show seasonal variation. Peaks appear in warmer months (May–September) and October. January–February show lower demand.
Insight	Summer tourism and outdoor activity drive increased demand. Holiday season (October–November) also elevates trips. Winter weather suppresses demand in early months.
Outcome	Adjust seasonal fleet size: increase inventory May–October, reduce January–February. Align driver incentive programmes with peak demand windows.

SECTION 3.2

Financial Analysis

3.2.1 — Monthly Revenue Trend

Visualisation: Line chart | Analysis type: Revenue Time-Series

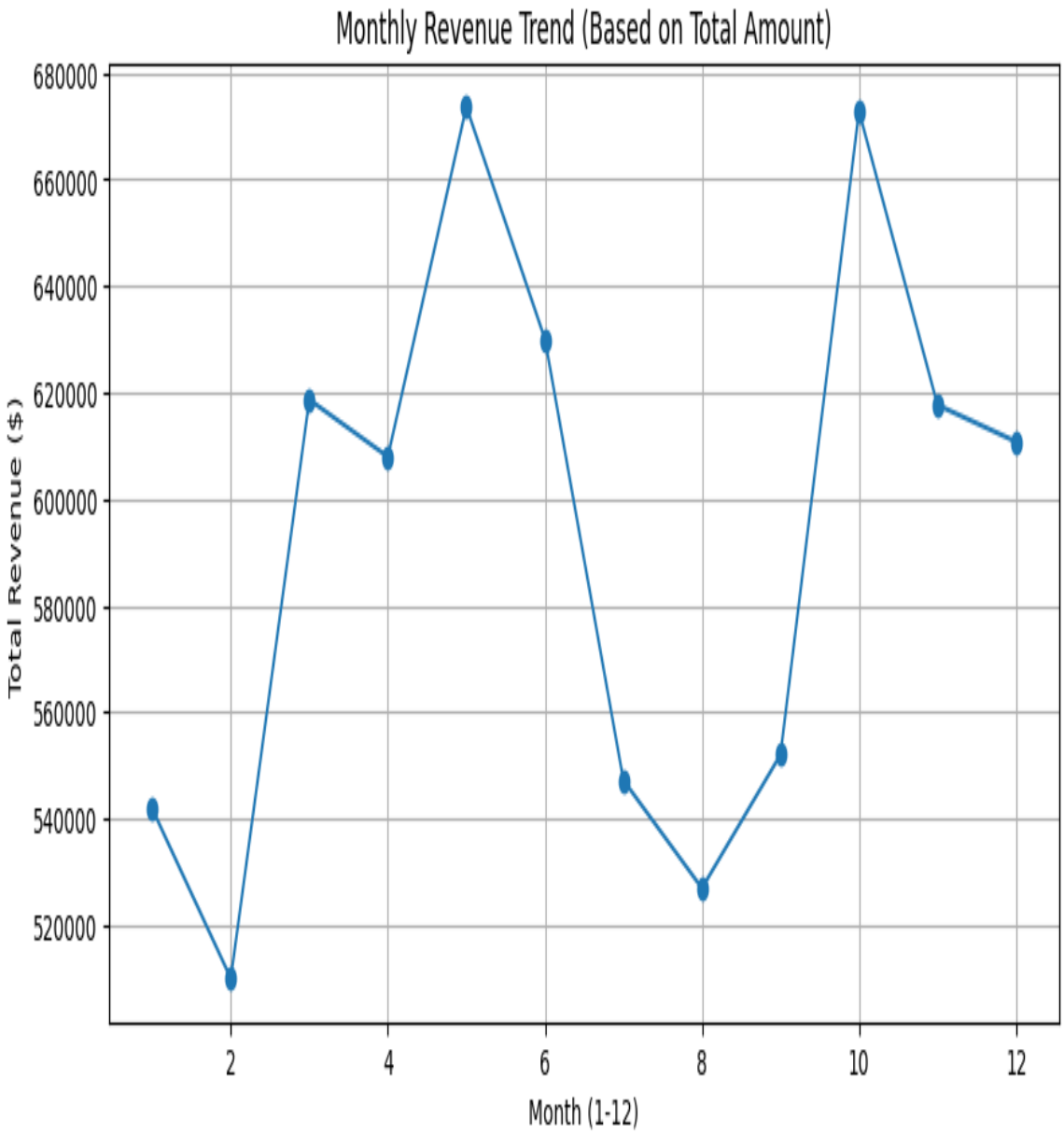

Fig 3.2.1 — Monthly Revenue Trend (total_amount)

Result	Revenue peaks around May (Month 5) and October (Month 10). January–February show the lowest revenue.
Insight	Revenue tracks trip volume closely — more trips = more revenue. Seasonal tourism and weather-driven patterns create predictable revenue fluctuations.
Outcome	Budget planning should account for ~15–20% revenue swing between peak (May, Oct) and low (Jan, Feb) months. Use slow months for vehicle maintenance and driver training.

3.2.2 — Quarterly Revenue Distribution

Visualisation: Pie chart | Analysis type: Proportion Analysis

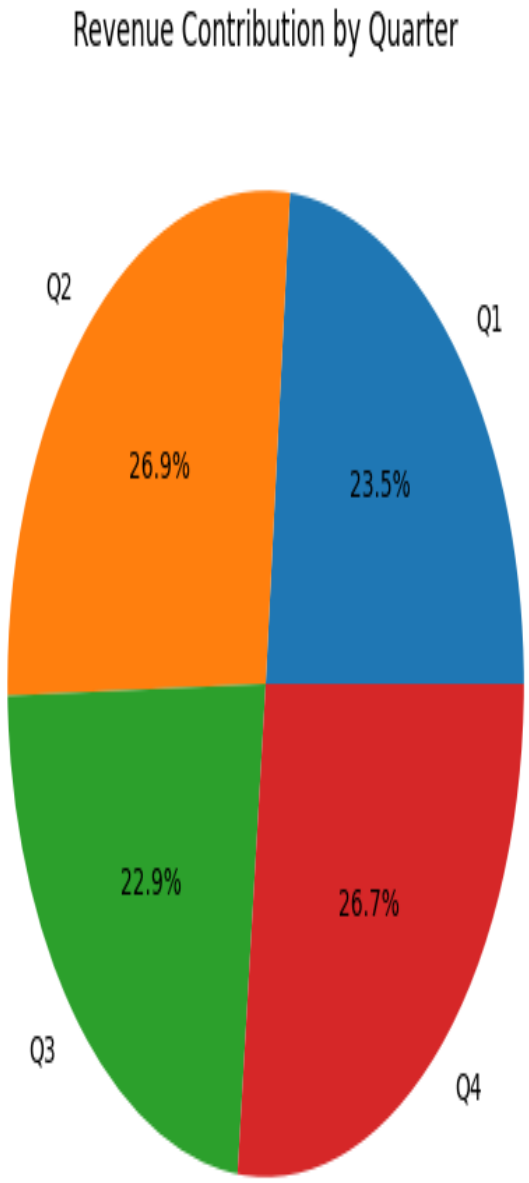

Fig 3.2.2 — Revenue Proportion by Quarter

Result	Q2 (26.9%) and Q4 (26.7%) generate the highest revenue shares. Q1 is lowest at ~23%.
Insight	Balanced quarterly distribution with slight Q2/Q4 advantage reflects NYC's spring events and fall tourism/holiday season.
Outcome	Invest in marketing and fleet expansion campaigns ahead of Q2 (April) and Q4 (September) to maximise revenue capture during peak windows.

3.2.3 — Trip Distance vs Fare Amount

Visualisation: Scatter plot | Analysis type: Bivariate Correlation

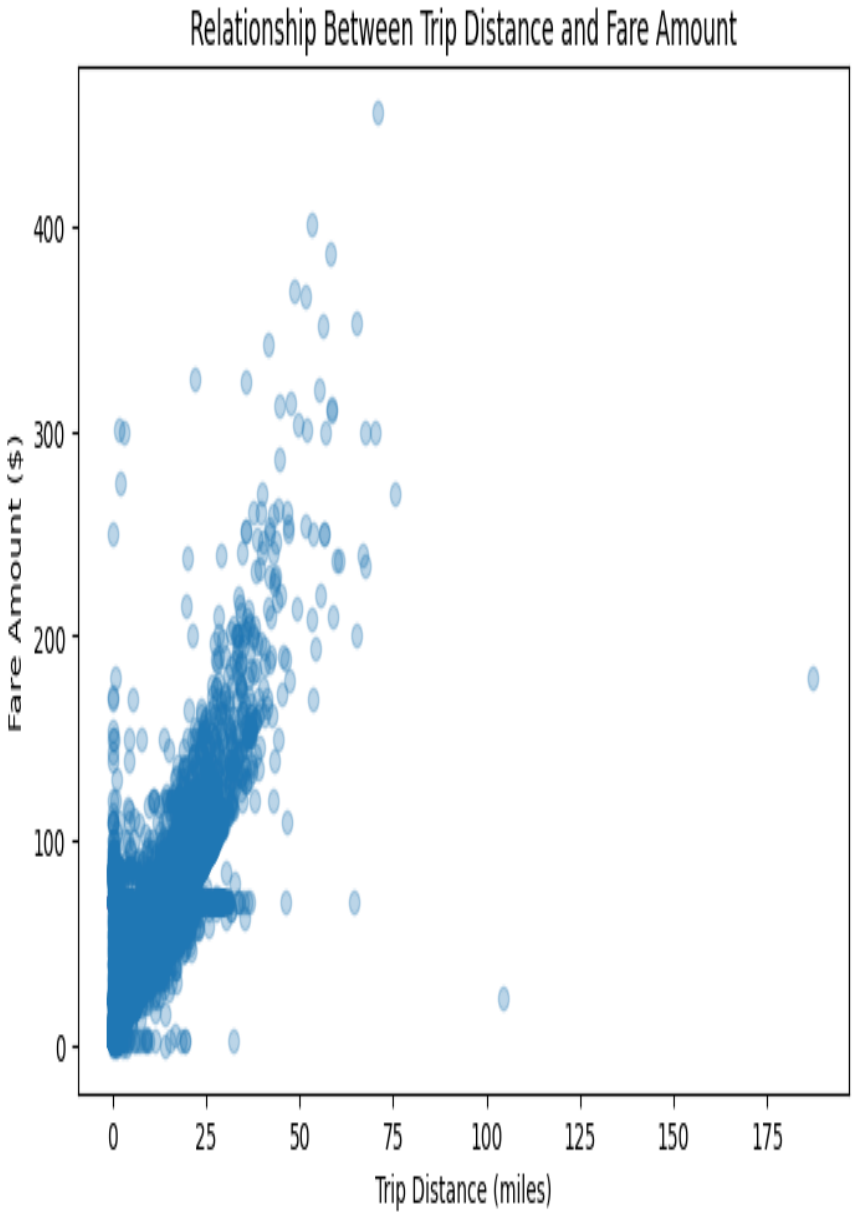

Fig 3.2.3 — Trip Distance vs Fare Amount (correlation = 0.87)

Result	Strong positive correlation (r = 0.87) between trip distance and fare amount. The relationship is approximately linear across most of the range.
Insight	The metered fare structure based on distance is working as designed. Fare predictability for passengers improves trust and booking rates.
Outcome	Long-distance trip incentives (airport runs, outer-borough routes) could be promoted to drivers as high-revenue opportunities given the strong distance-to-fare relationship.

3.2.4 — Fare vs Trip Duration and Passenger Count

Visualisation: Scatter plots | Analysis type: Bivariate Correlation

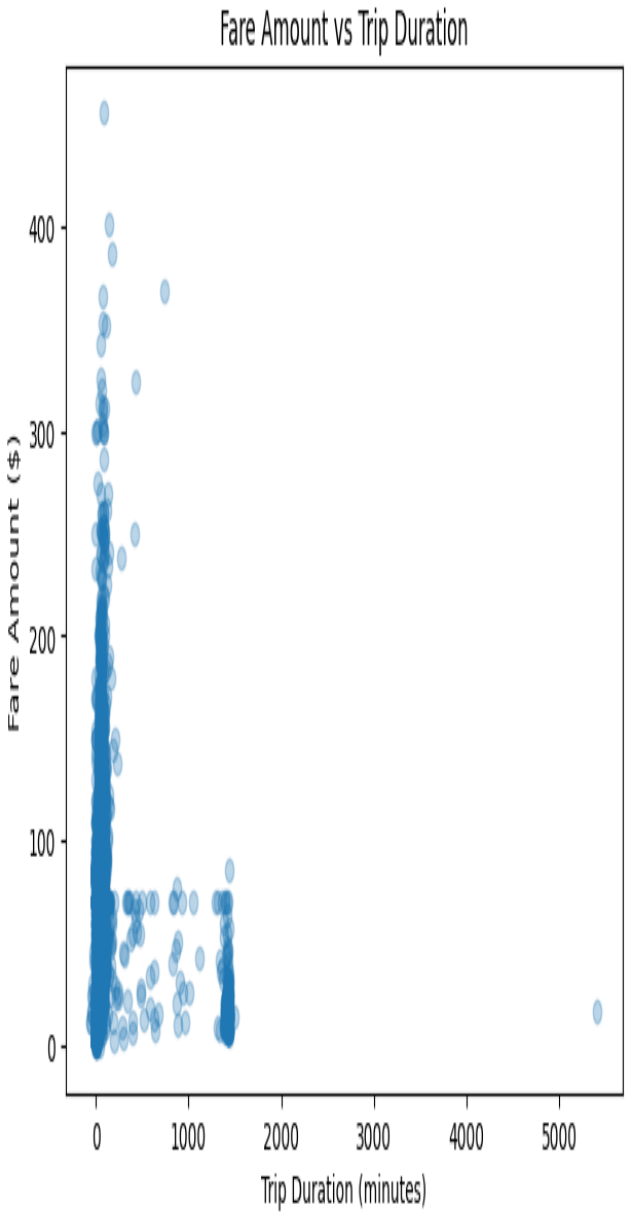

Fig 3.2.4a — Fare vs Trip Duration (r=0.26)

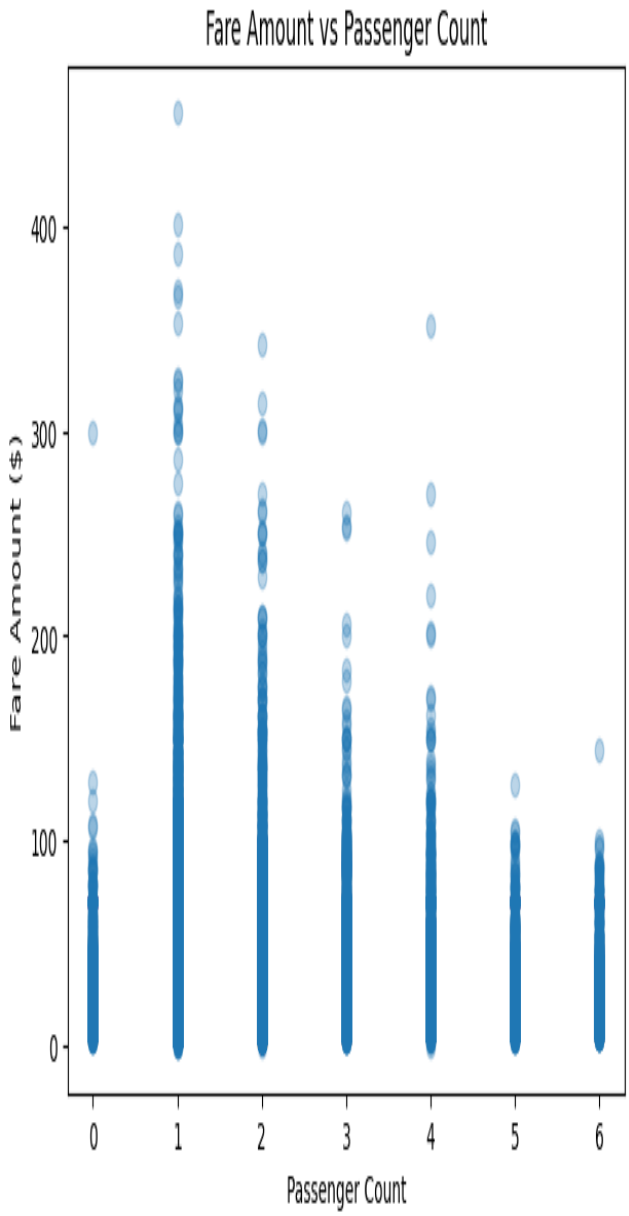

Fig 3.2.4b — Fare vs Passenger Count (r=0.045)

Result	Fare vs duration: weak positive correlation (r=0.26). Fare vs passenger count: negligible correlation (r=0.045).
Insight	Duration contributes weakly to fare — traffic and congestion extend trips without proportional fare increase. Passenger count has essentially no fare impact (flat-rate structure).
Outcome	Consider introducing time-based fare components during congested hours. Ride-sharing promotions for multi-passenger trips could improve per-trip revenue without fare structure changes.

3.2.5 — Tip Amount vs Trip Distance

Visualisation: Scatter plot | Analysis type: Bivariate Correlation

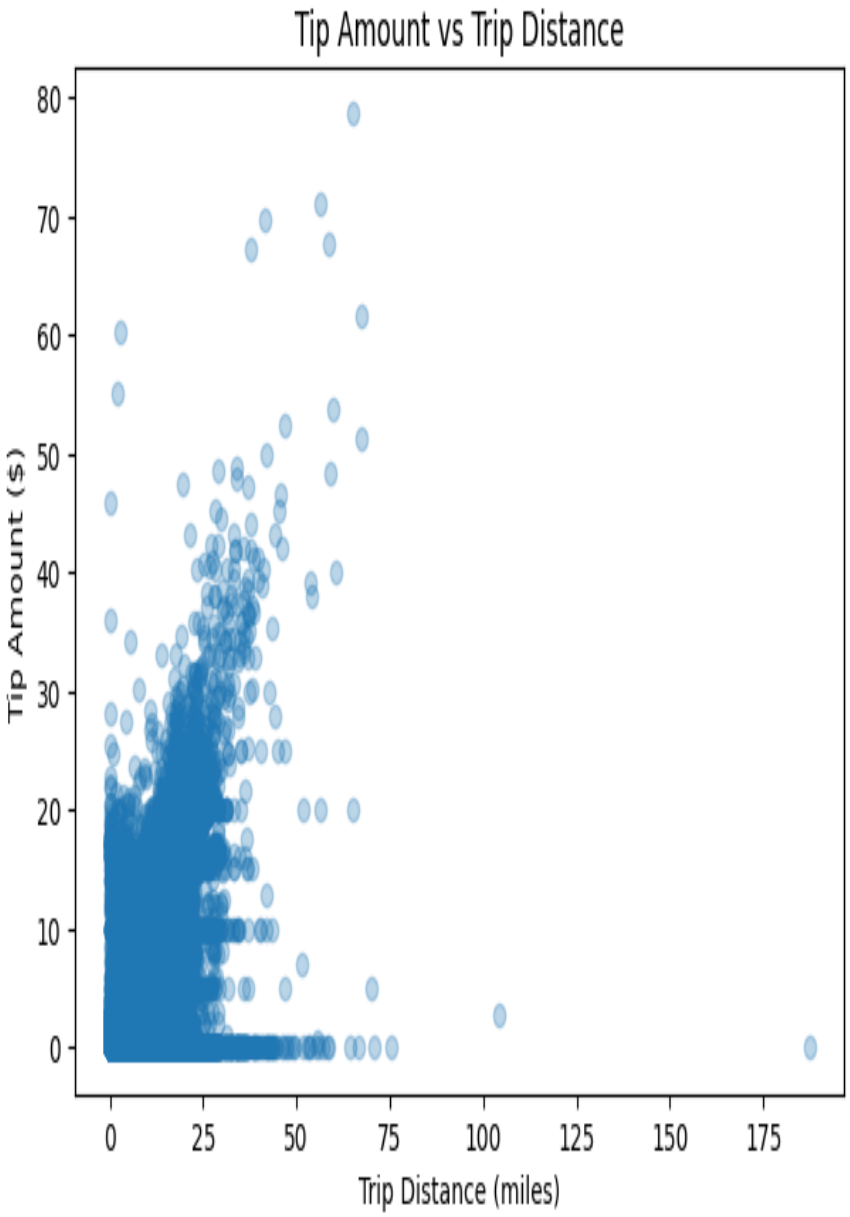

Fig 3.2.5 — Tip Amount vs Trip Distance (r=0.61)

Result	Moderate-to-strong positive correlation (r=0.61) between tip amount and trip distance.
Insight	Longer trips tend to generate higher absolute tips. Passengers on extended journeys are more satisfied and more generous — possibly due to better service perception on longer rides.
Outcome	Encourage drivers to pursue airport and outer-borough trips by highlighting higher tip potential. Introduce service quality training focused on longer-duration trips.

3.2.6 — Payment Type Distribution

Visualisation: Bar chart | Analysis type: Categorical Distribution

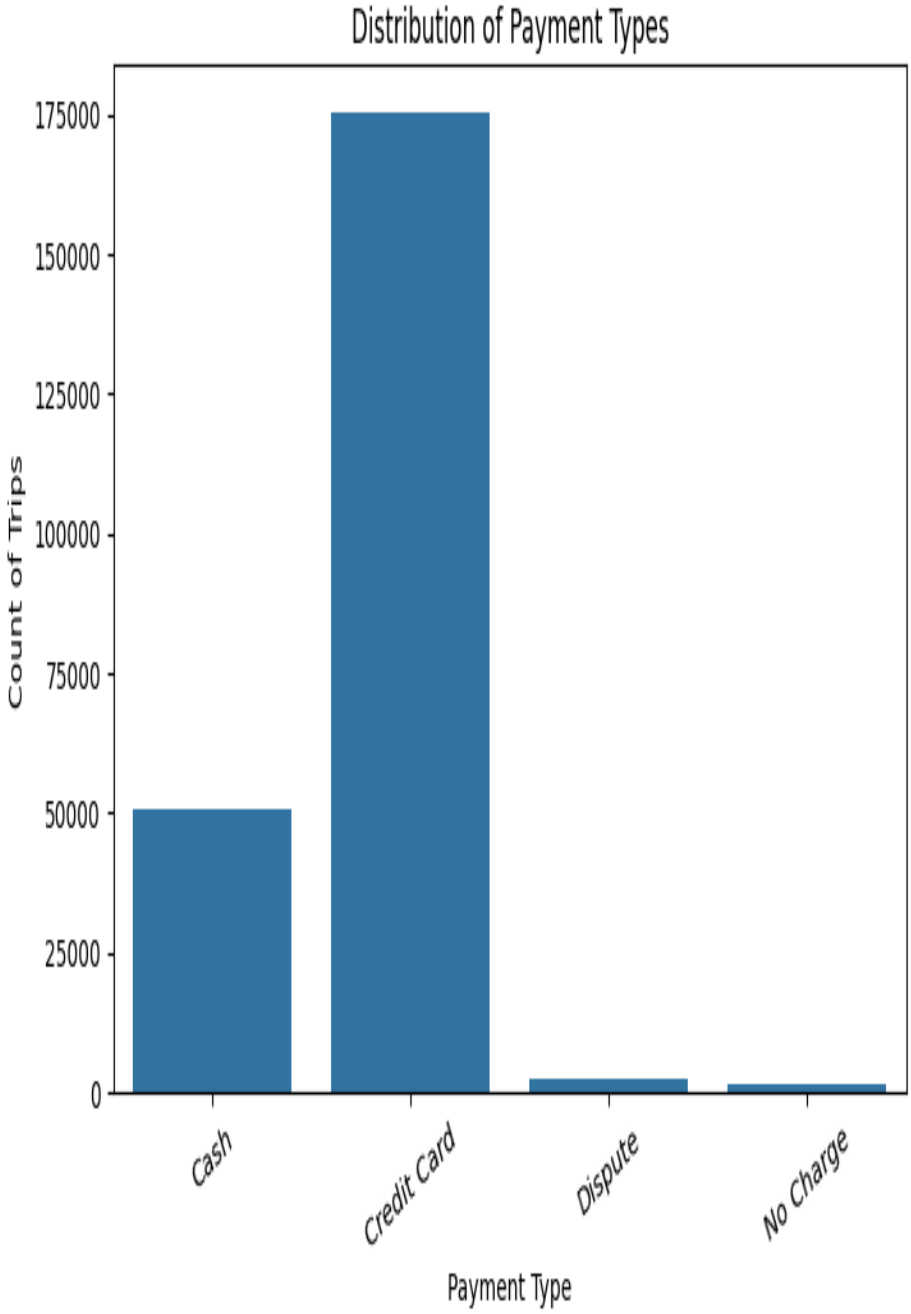

Fig 3.2.6 — Distribution of Payment Types

Result	Credit card is the dominant payment method (majority of trips). Cash is the second most common. No Charge, Dispute, and Voided trips are minimal.
Insight	Shift toward digital payments reflects broader NYC cashless trends. Credit card payments are linked to higher tip amounts (as TIP is captured automatically in card transactions).
Outcome	Incentivise card payment adoption with loyalty rewards. Investigate dispute patterns — even low dispute volumes can indicate service quality issues requiring investigation.

SECTION 3.3

Geographical Analysis

3.3.1 — NYC Taxi Zone Map

Visualisation: GeoPandas shapefile plot | Analysis type: Spatial Reference

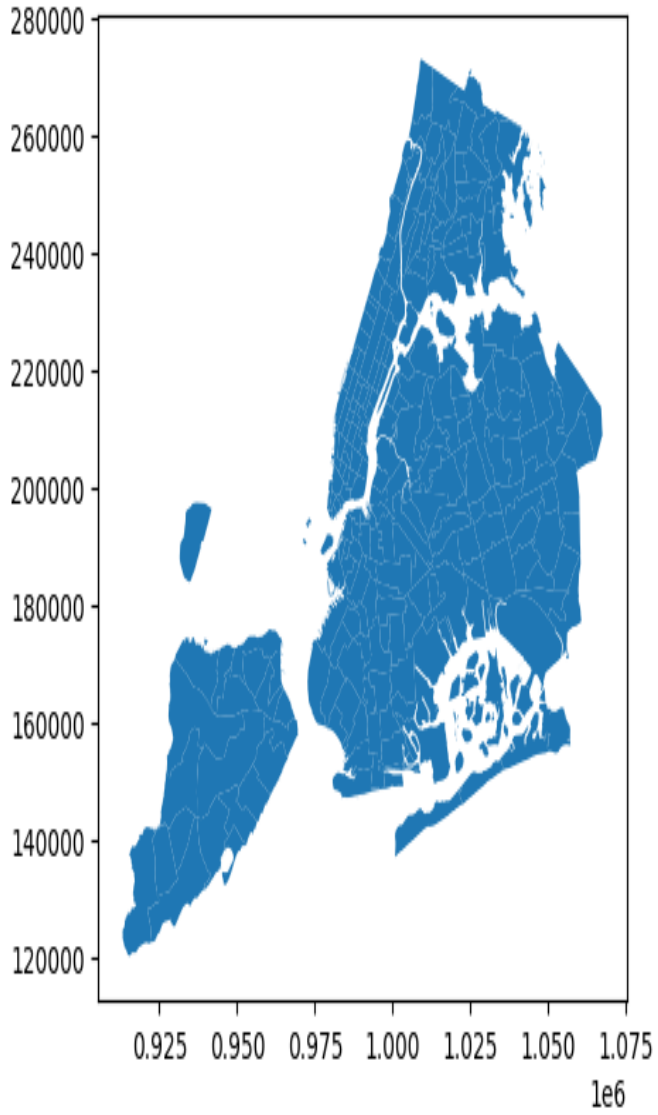

Fig 3.3.1 — NYC Taxi Zones (263 zones, 5 boroughs)

The NYC TLC divides the city into **263 taxi zones** across five boroughs: Manhattan, Brooklyn, Queens, Bronx, and Staten Island. Each trip record references a zone ID for both pickup and dropoff. Zone geometry data was loaded via GeoPandas using the taxi_zones.shp shapefile and merged with trip records on LocationID.

3.3.2 — Zone-Wise Trip Density (Choropleth)

Visualisation: Choropleth map | Analysis type: Spatial Density

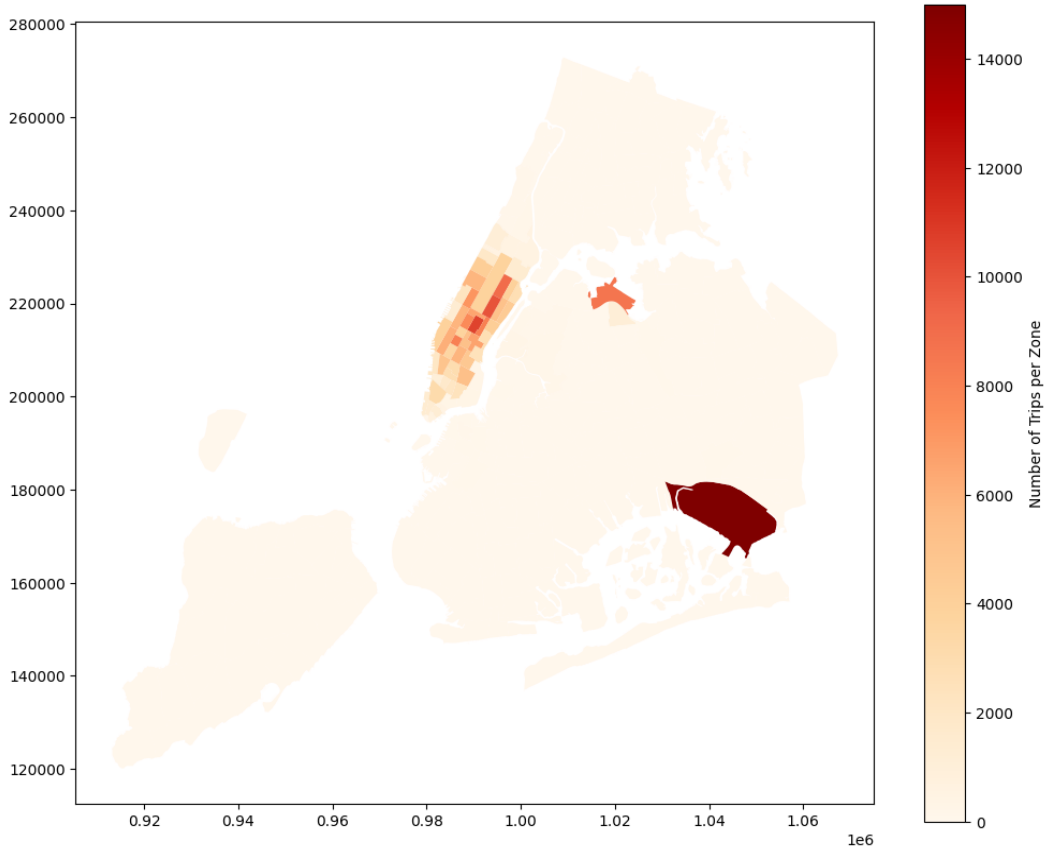

Fig 3.3.2 — Collision Density by Taxi Zone (darker = more trips)

Result	A small number of Midtown Manhattan zones account for an overwhelming concentration of trips. Outer borough zones and residential areas show near-zero trip density.
Insight	Trip concentration in Manhattan reflects the highest pedestrian traffic, business density, and tourist activity in NYC. Outer boroughs have subway/bus alternatives that reduce taxi reliance.
Outcome	Concentrate fleet in Midtown Manhattan during business hours. Consider outer-borough incentives to capture underserved demand and reduce deadhead (empty) return trips.

SECTION 3.4

Operational Efficiency

3.4.1 — Estimated Trips per Hour (Scaled)

Visualisation: Line + Bar charts | Analysis type: Volume Time-Series

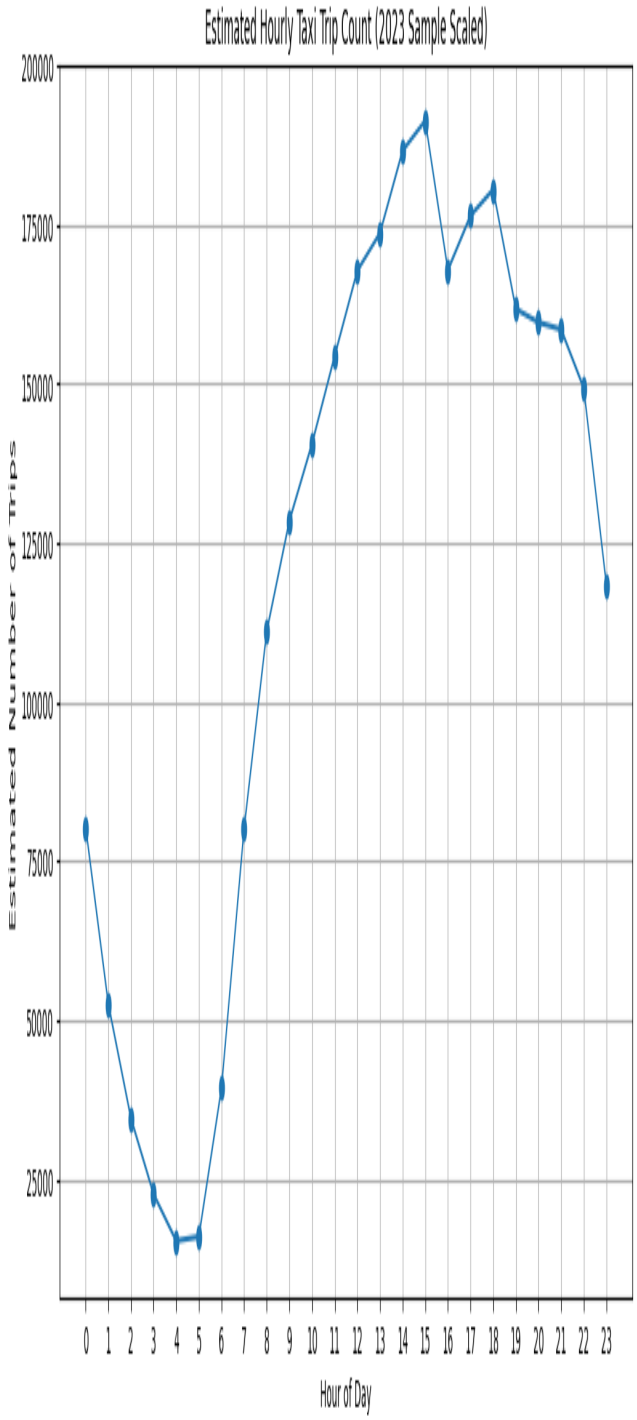

Fig 3.4.1a — Trips per Hour (Line)

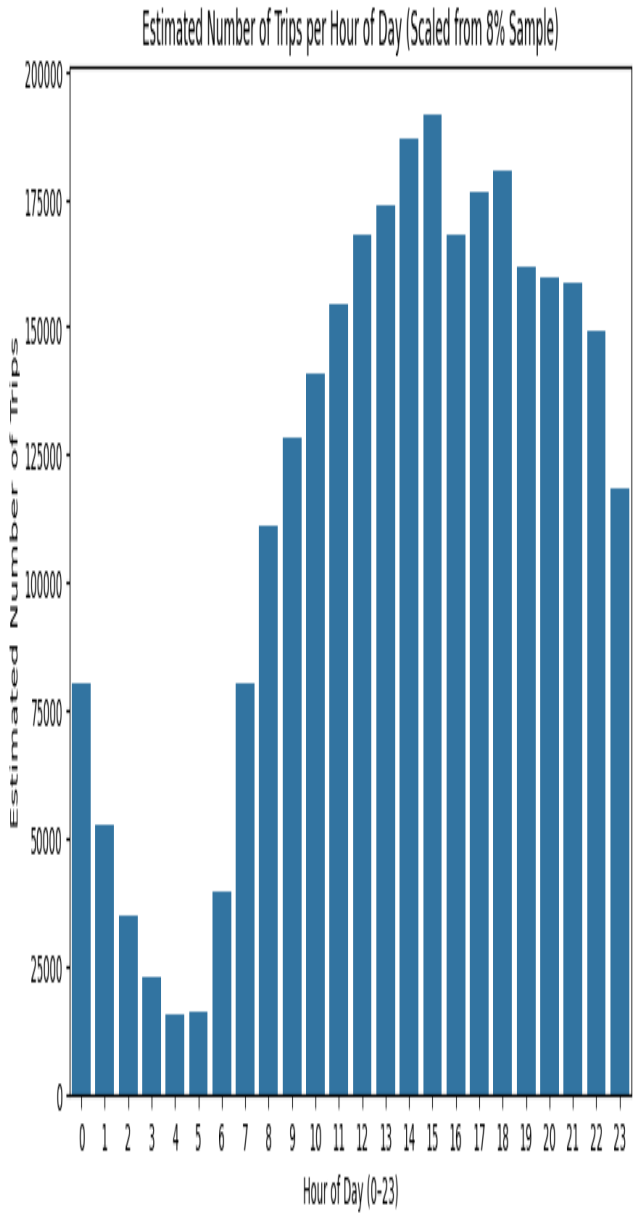

Fig 3.4.1b — Trips per Hour (Bar)

Result	Peak demand is at hour 15 (3 PM). Minimum at hour 4 (4 AM). Scaled estimates show millions of trips at peak vs hundreds of thousands overnight.
Insight	The 3 PM peak exceeds the traditional 5 PM rush — likely reflecting school pickups, shift workers, and early business departures combining with general afternoon activity.
Outcome	Deploy maximum fleet at 3 PM. Implement dynamic pricing from 2–7 PM. Allow driver shift rotations during the 2–4 AM trough to ensure fresh availability at 6 AM.

3.4.2 — Weekday vs Weekend Hourly Demand

Visualisation: Line + Seaborn overlay | Analysis type: Segmented Temporal

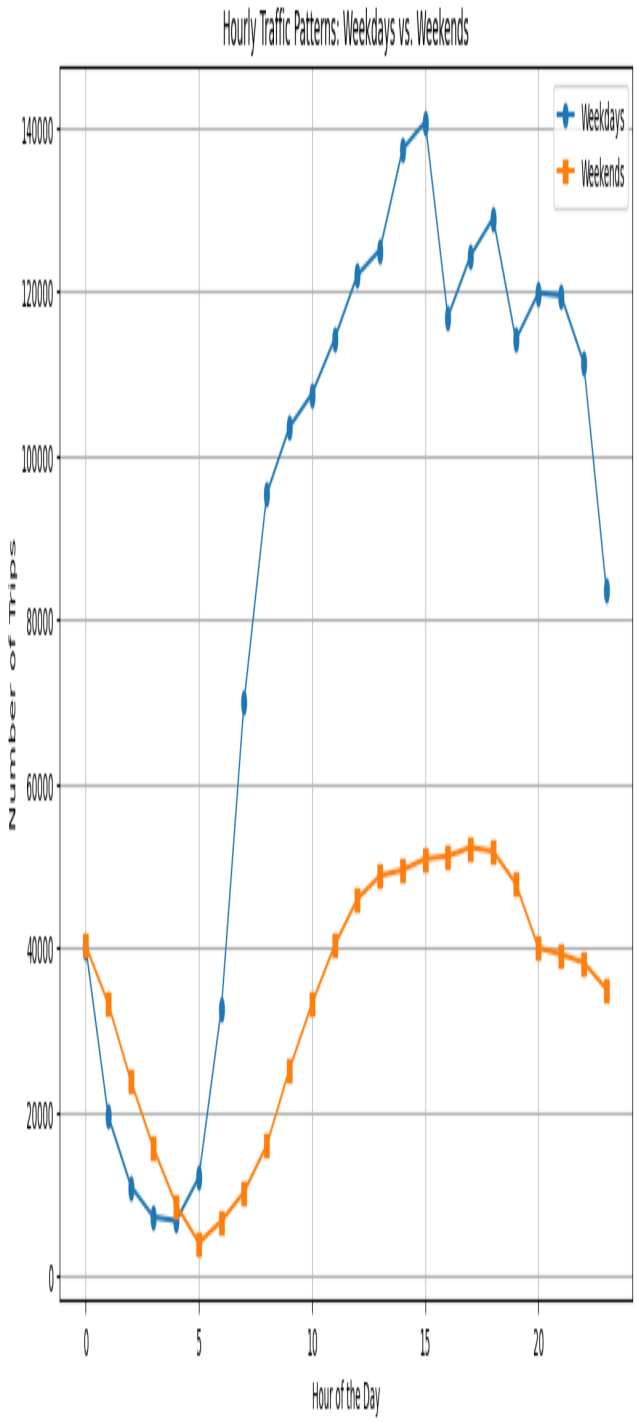

Fig 3.4.2a — Weekday vs Weekend (Line)

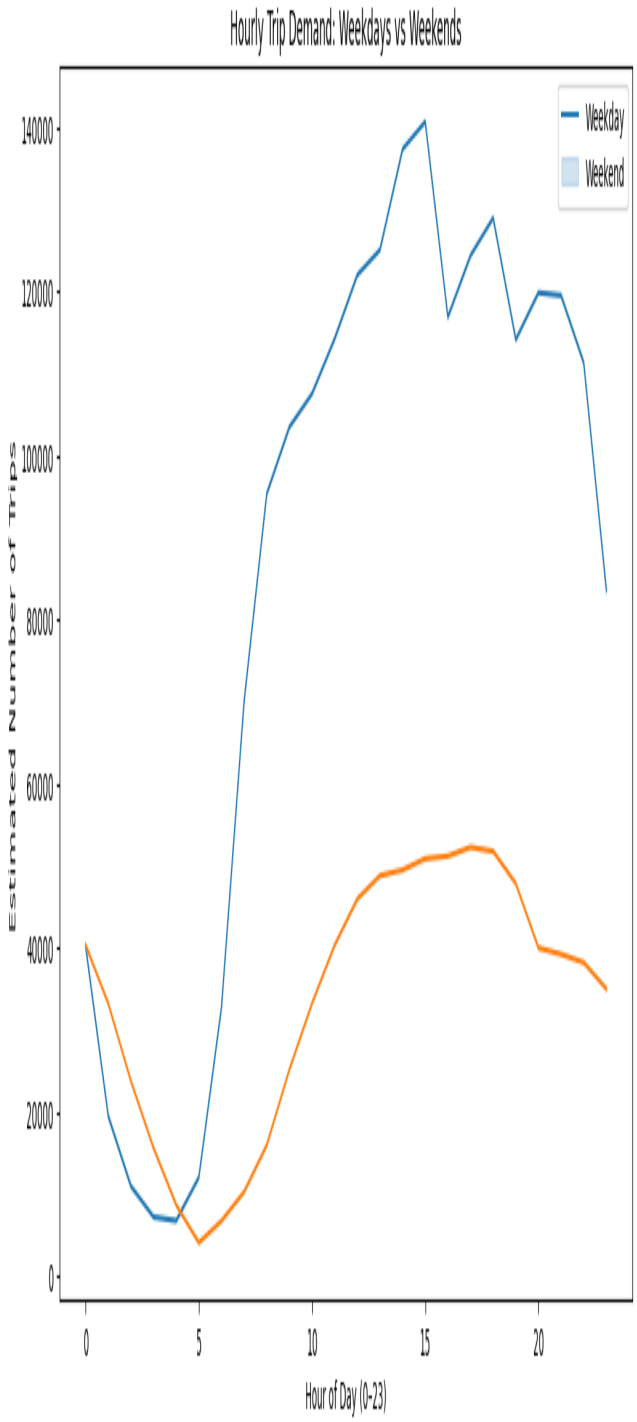

Fig 3.4.2b — Weekday vs Weekend (Seaborn)

Result	Weekdays have sharper morning (7–9 AM) and evening (5–7 PM) peaks. Weekends show flatter, later-starting demand with a broad midday peak.
Insight	Weekday peaks driven by commuting. Weekend patterns reflect leisure, late-night entertainment, and daytime tourism — spreading demand more evenly through the day.
Outcome	Separate weekday and weekend driver schedules. Morning early-shift drivers critical on weekdays. Late-night coverage more valuable on weekends.

3.4.3 — Hourly Trends for Top 10 Pickup & Dropoff Zones

Visualisation: Multi-line charts | Analysis type: Zone-Level Temporal

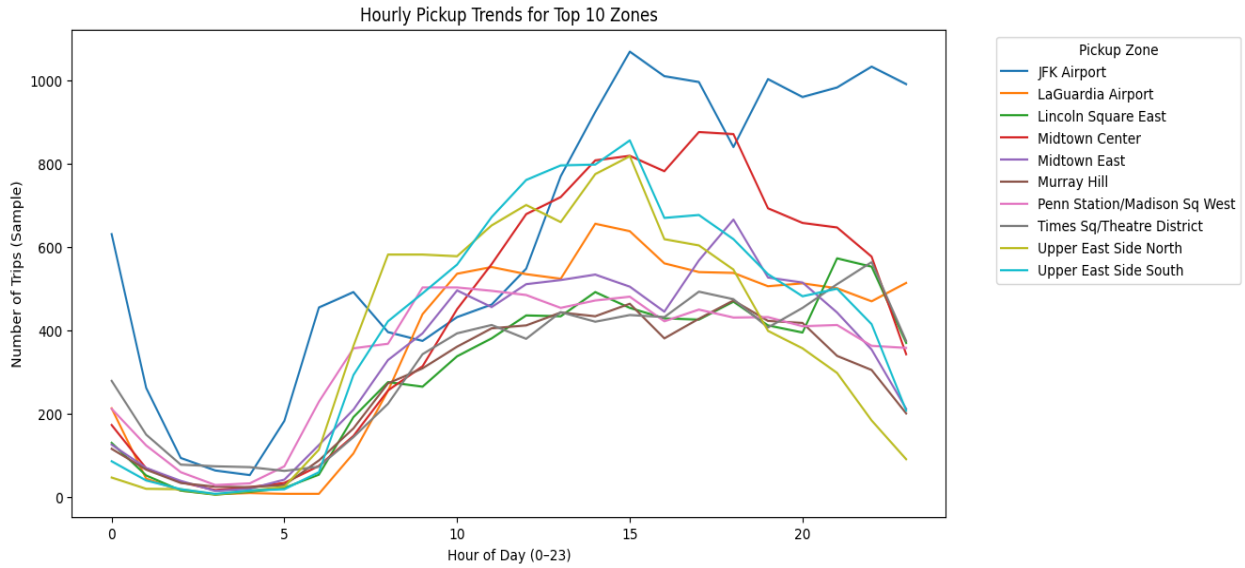

Fig 3.4.3a — Hourly Pickup Trends for Top 10 Zones

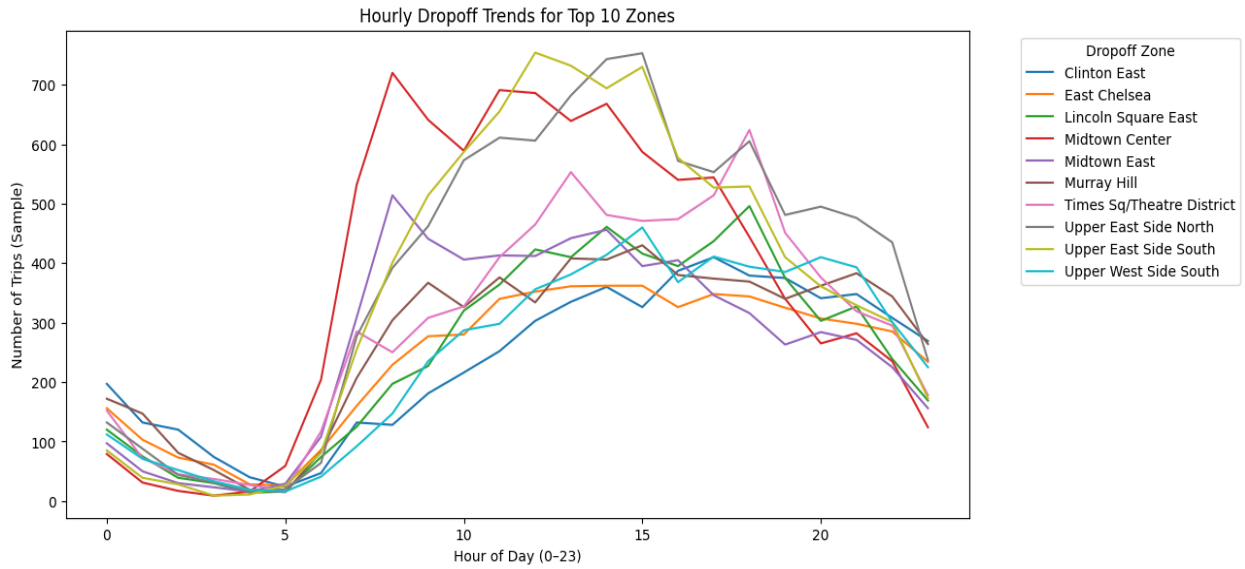

Fig 3.4.3b — Hourly Dropoff Trends for Top 10 Zones

Result	Midtown East, Penn Station, and JFK Airport dominate pickup volumes. Peak hours differ by zone — airports peak in morning and evening; entertainment zones peak in evening.
Insight	Each high-demand zone has a distinct temporal fingerprint. Airport zones align with flight schedules, business zones align with work hours, and nightlife zones peak late.
Outcome	Zone-specific deployment schedules: position cabs near JFK/LGA in early morning and evening, Midtown during business hours, and entertainment districts after 8 PM.

3.4.4 — Top Night Pickup & Dropoff Zones (11 PM – 5 AM)

Visualisation: Bar charts | Analysis type: Night-Hours Spatial

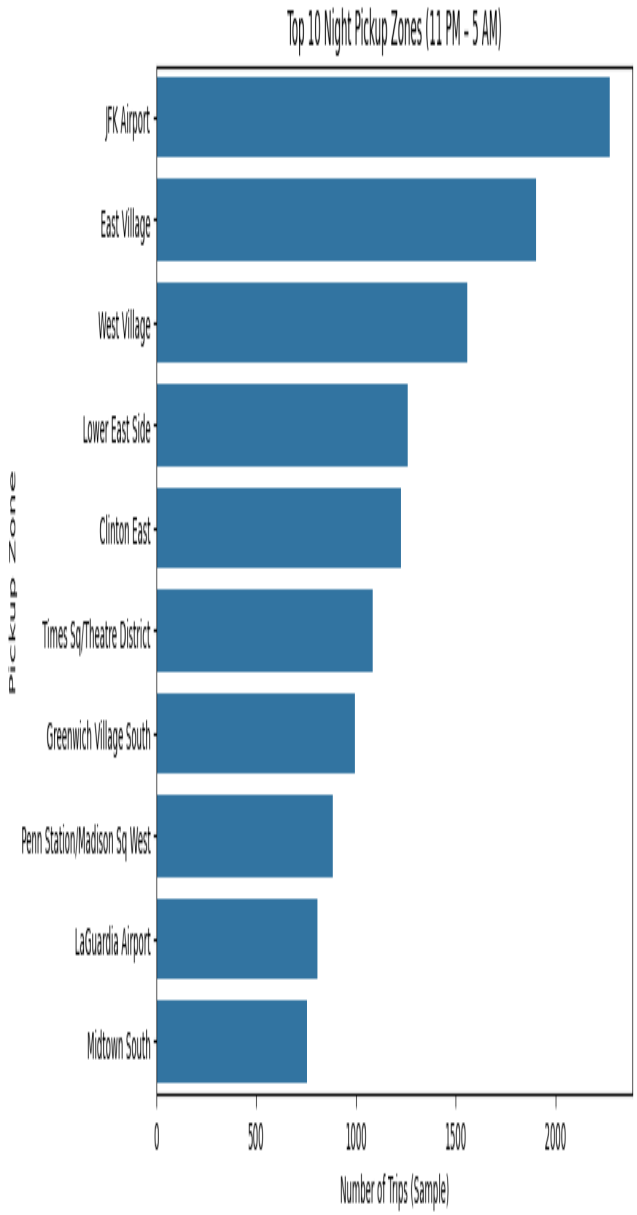

Fig 3.4.4a — Top 10 Night Pickup Zones

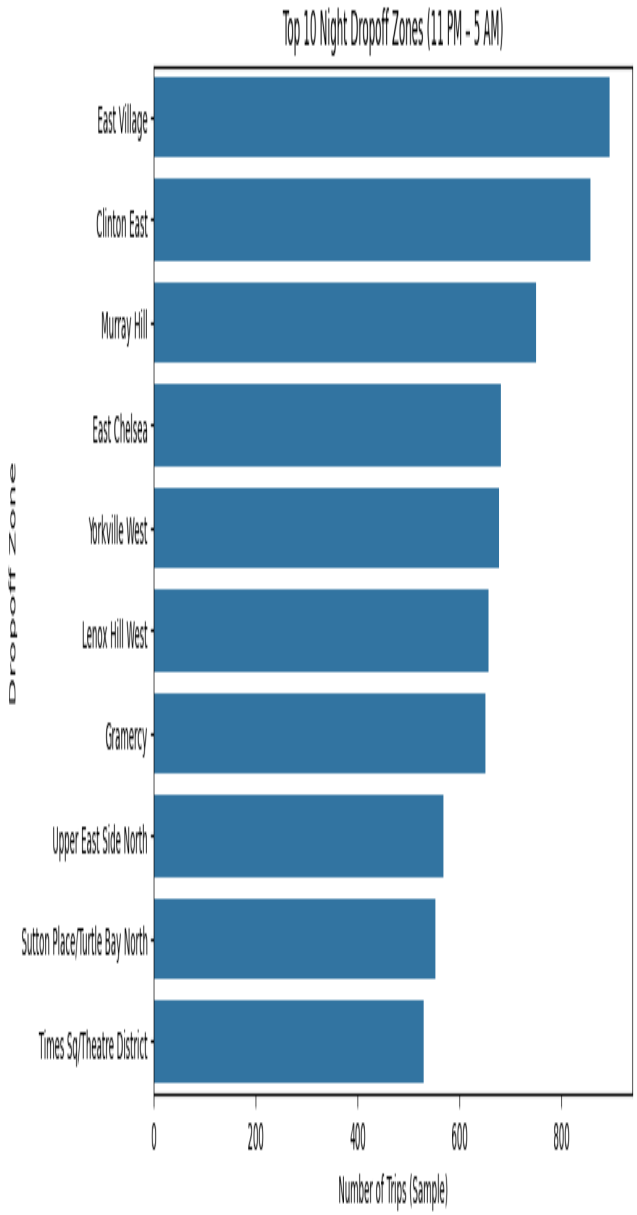

Fig 3.4.4b — Top 10 Night Dropoff Zones

Result	Late-night activity concentrates around entertainment districts, nightlife areas, and transit hubs. Residential zones appear in dropoff lists but not pickups.
Insight	Nightlife and entertainment venues generate consistent late-night demand. The asymmetry between night pickups (entertainment) and dropoffs (residential) reveals the demand direction.
Outcome	Night fleet should position near entertainment hubs at 10 PM, expecting residential dropoff runs. Surge pricing during 1–3 AM captures high-demand, low-supply windows.

3.4.5 — Night vs Day Revenue Share

Visualisation: Pie chart | Analysis type: Revenue Segmentation

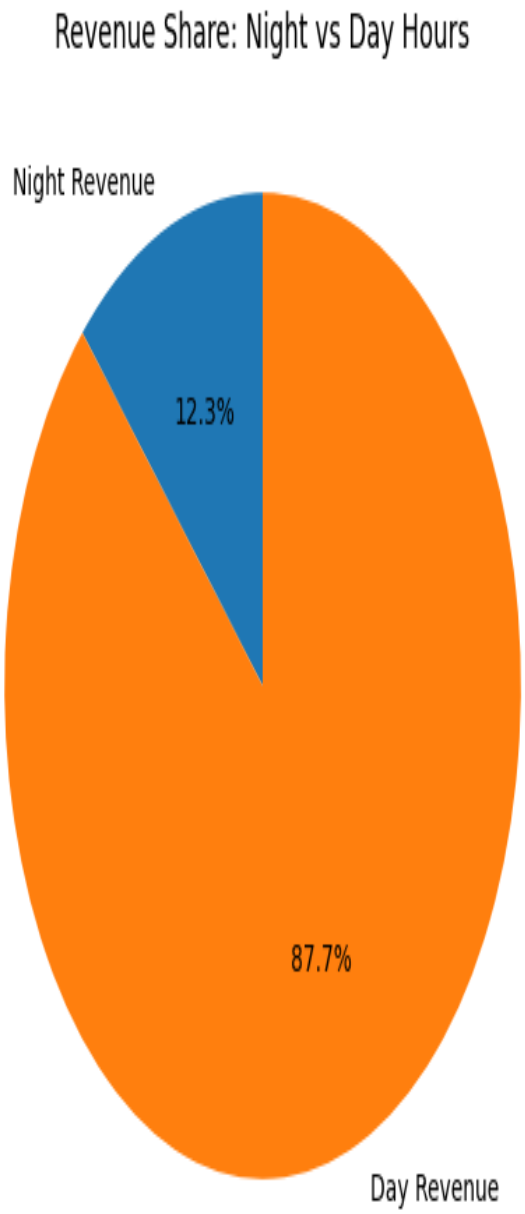

Fig 3.4.5 — Night (11PM–5AM) vs Day Revenue Split

Result	Day-time hours (6 AM – 10 PM) contribute ~83% of total revenue. Night hours (11 PM – 5 AM) contribute ~17% despite covering 7 hours of the day.
Insight	While night trips are fewer, they often include surcharges and longer distances (airport + outer borough runs) that elevate per-trip revenue.
Outcome	Night operations are revenue-positive despite lower volume. Maintaining a reduced but active night fleet is economically justified — especially near airports and entertainment zones.

SECTION 3.5

Pricing Strategy Analysis

3.5.1 — Fare per Mile per Passenger Count

Visualisation: Bar chart | Analysis type: Pricing Efficiency

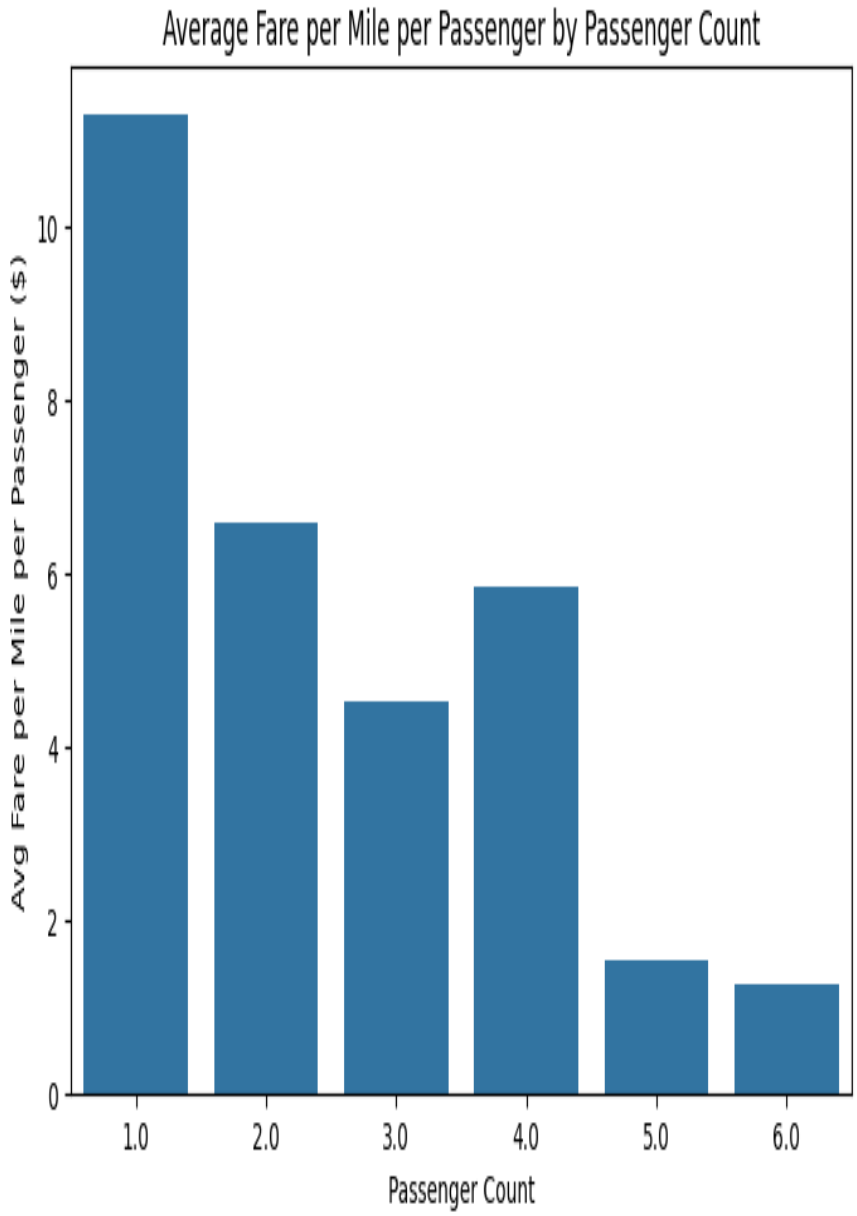

Fig 3.5.1 — Average Fare per Mile per Passenger by Passenger Count

Result	Fare per mile per passenger decreases as passenger count increases — solo rides are most expensive per person per mile; group rides offer better per-person value.
Insight	Single-passenger trips cross-subsidise the fixed cost structure. Group rides distribute cost across passengers, making per-person rates more competitive versus alternatives.
Outcome	Promote group ride pricing packages to increase multi-passenger bookings. Position taxi as a cost-competitive option for 3–4 person groups vs individual ride-hailing.

3.5.2 — Fare per Mile by Hour and Day of Week

Visualisation: Line + Bar charts | Analysis type: Temporal Pricing

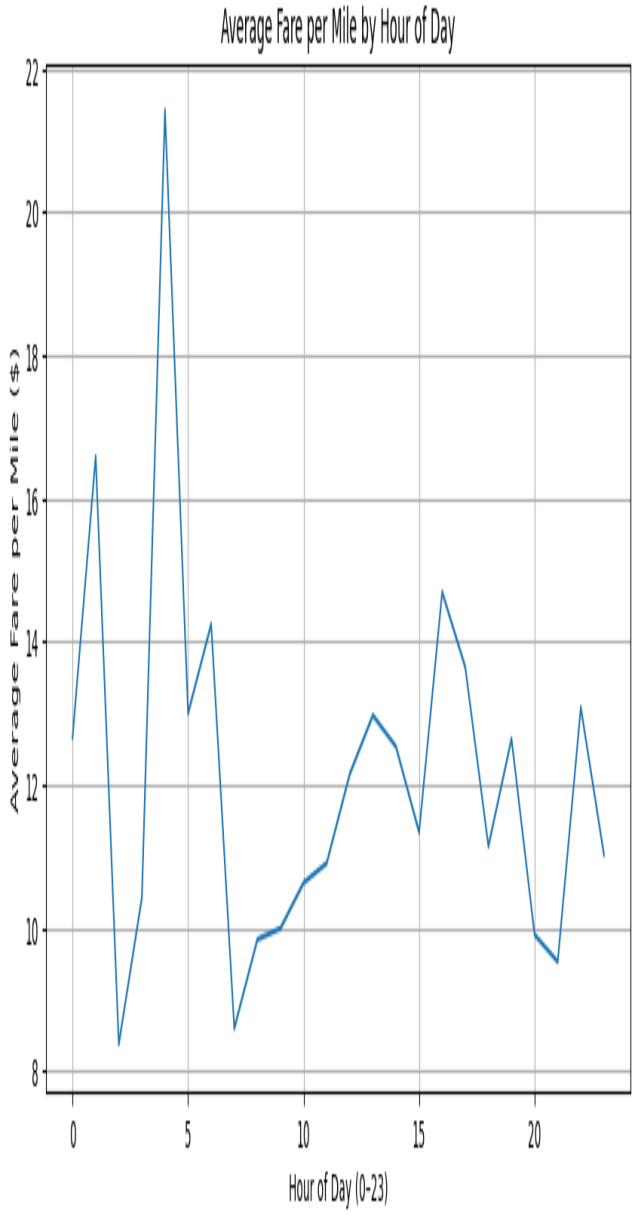

Fig 3.5.2a — Fare per Mile by Hour

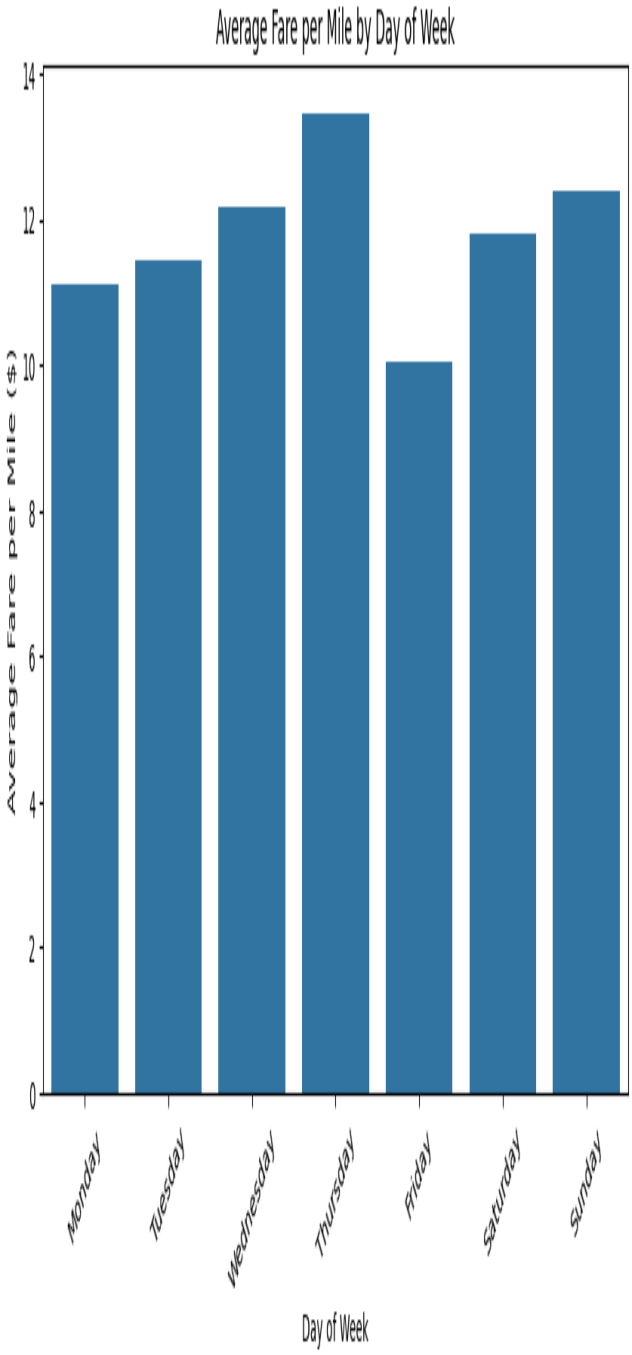

Fig 3.5.2b — Fare per Mile by Day

Result	Fare per mile peaks during late night (11 PM – 3 AM) and early morning. Day-of-week variation is relatively low — weekends slightly higher than weekdays.
Insight	Late-night premium likely driven by congestion surcharges and airport-type flat rates kicking in. The distance component of fare is less influenced by day of week than by time of day.

Outcome	Introduce time-of-day surge factor for the 11 PM – 3 AM window to align pricing with higher per-mile revenue potential. Keep weekday rates competitive with ride-hailing alternatives.

3.5.3 — Vendor Fare per Mile Comparison by Hour

Visualisation: Multi-line chart | Analysis type: Vendor Benchmarking

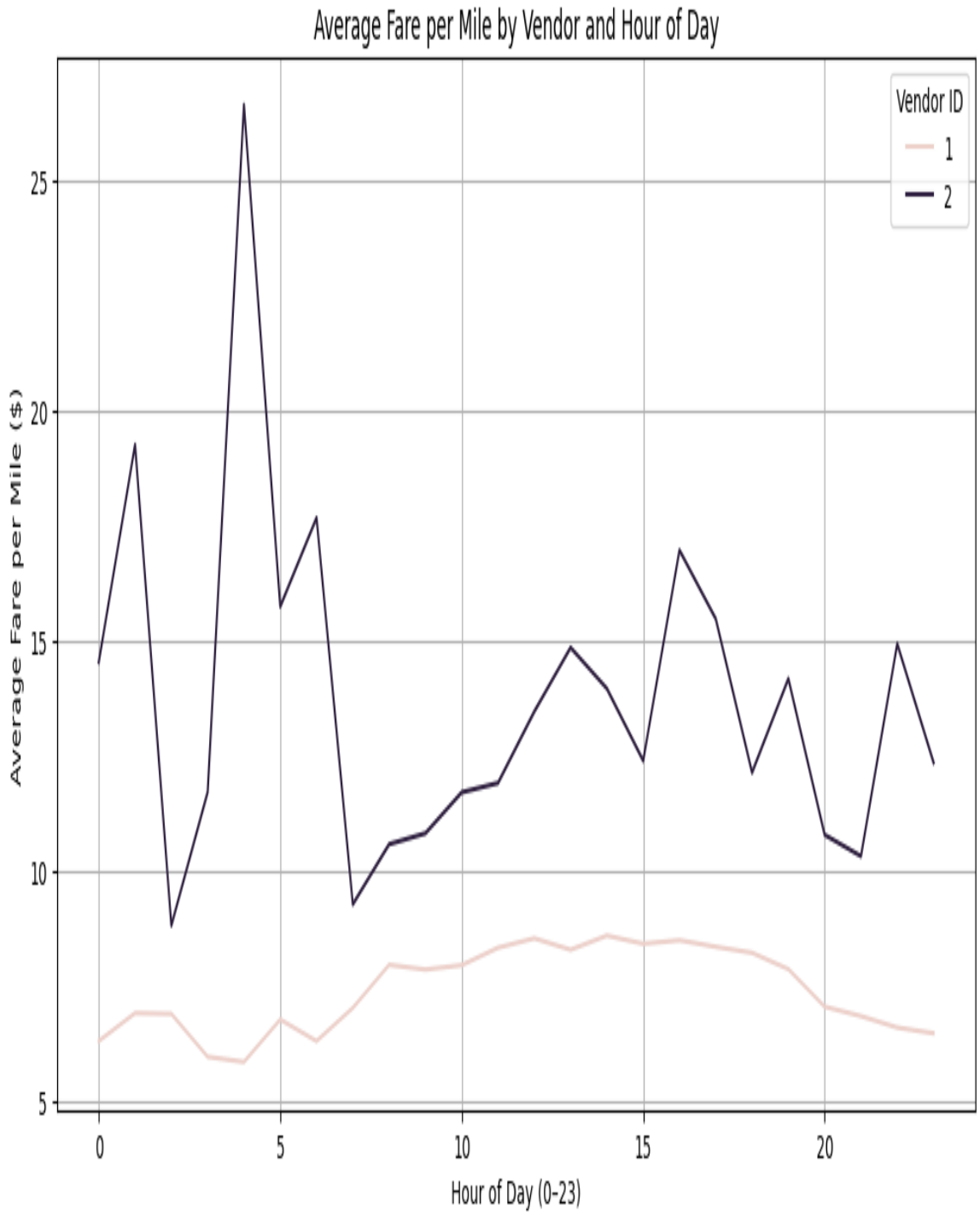

Fig 3.5.3 — Average Fare per Mile by Vendor and Hour of Day

Result	Two vendors (VendorID 1 and 2) show distinct fare-per-mile profiles across hours. One vendor consistently charges higher per-mile rates at certain hours.

Insight	Vendor pricing differences may reflect metering algorithm differences, route specialisation, or fleet composition (standard vs premium vehicles).
Outcome	Benchmark against the lower-fare vendor during non-peak hours to remain price-competitive. Investigate whether higher-fare vendor's premium reflects service quality differences.

3.5.4 — Vendor Fare by Distance Tier

Visualisation: Grouped bar chart | Analysis type: Tiered Pricing

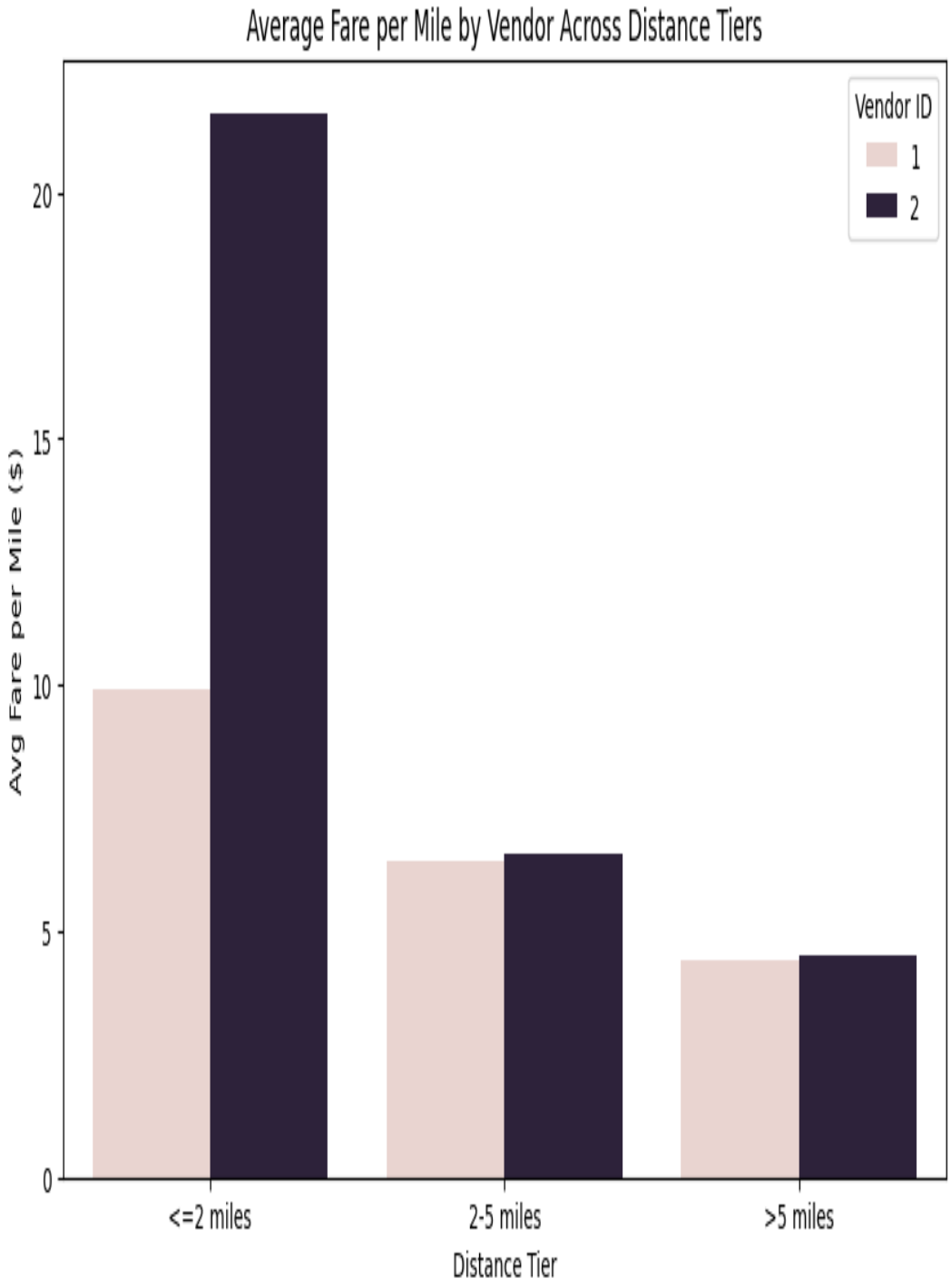

Fig 3.5.4 — Average Fare per Mile by Vendor and Distance Tier (≤2 mi / 2–5 mi / >5 mi)

Result	Short trips (≤2 miles) have the highest fare per mile for both vendors. Long trips (>5 miles) have the lowest fare per mile. Both vendors follow the same distance-tier pattern.
Insight	Short trips are disproportionately expensive per mile — largely because of fixed base fares and minimum charges being applied regardless of distance.
Outcome	Promote short-trip flat-rate packages in high-density zones to increase short-distance bookings. Long-distance incentive rates could attract airport and interstate trip volume.

SECTION 3.6

Customer Experience & Behaviour

3.6.1 — Tip Percentage by Distance Tier and Passenger Count

Visualisation: Bar charts | Analysis type: Tipping Behaviour

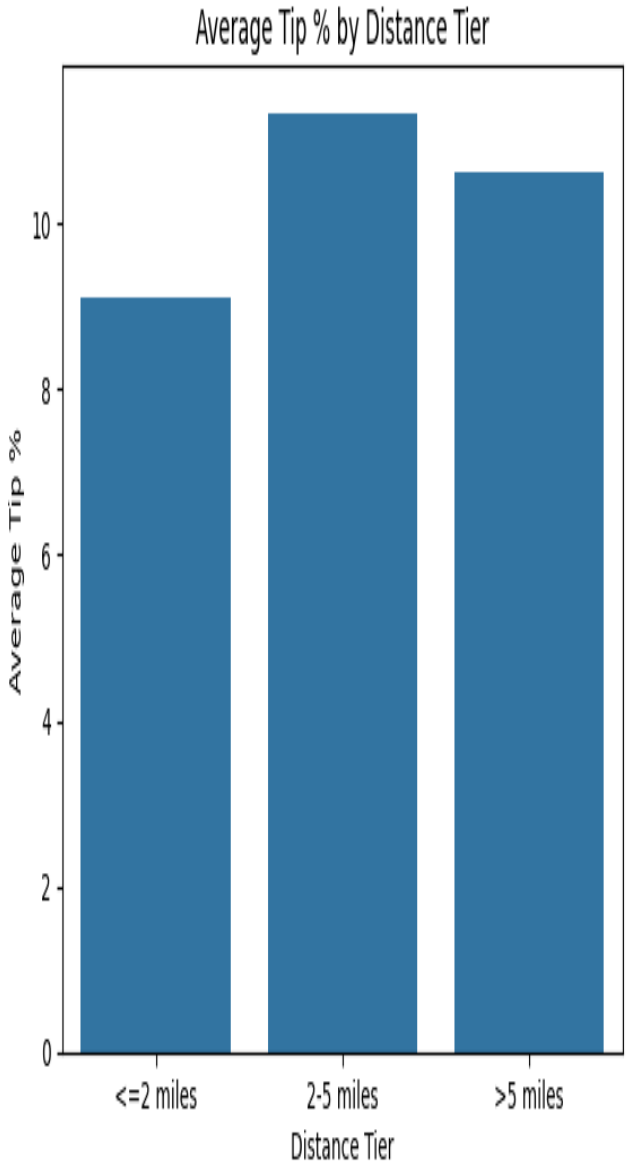

Fig 3.6.1a — Avg Tip % by Distance Tier

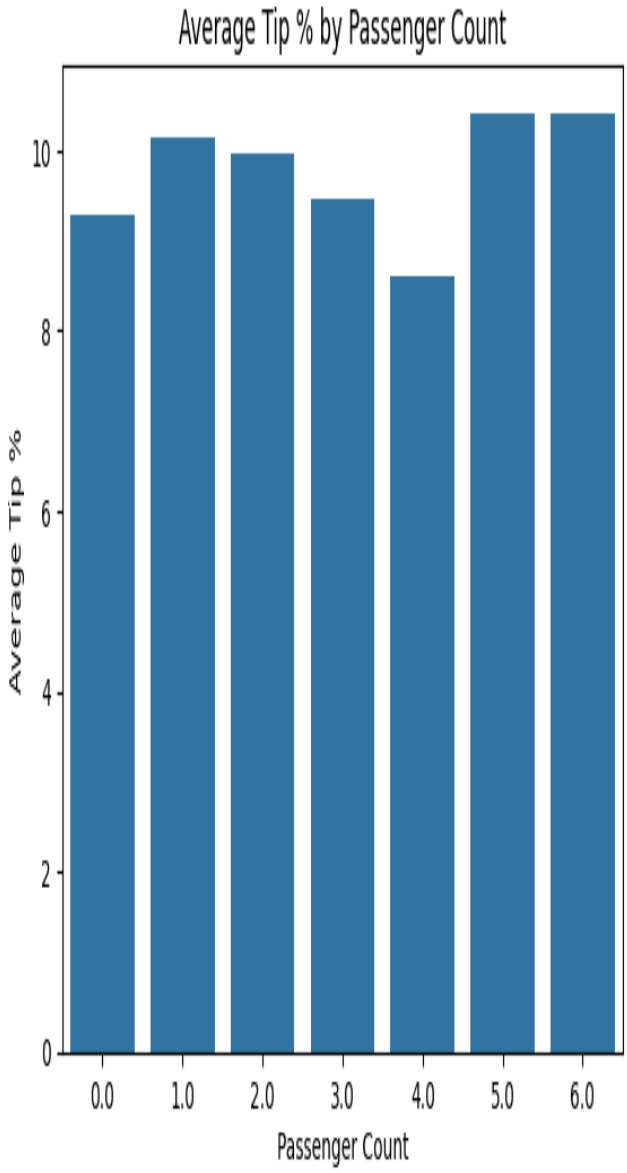

Fig 3.6.1b — Avg Tip % by Passenger Count

Result	Tip % increases with trip distance. Medium-group rides (2–3 passengers) show higher tip percentages than solo or large-group rides.
Insight	Longer trips give passengers more time to form a positive experience — familiarity with the driver and arriving safely appears to increase generosity. Group rides may tip collectively.
Outcome	Train drivers to be attentive on longer trips. Consider adding in-app prompts after long-distance rides to nudge tipping behaviour at the moment of payment.

3.6.2 — Tip Percentage by Hour of Day

Visualisation: Line chart | Analysis type: Temporal Tipping

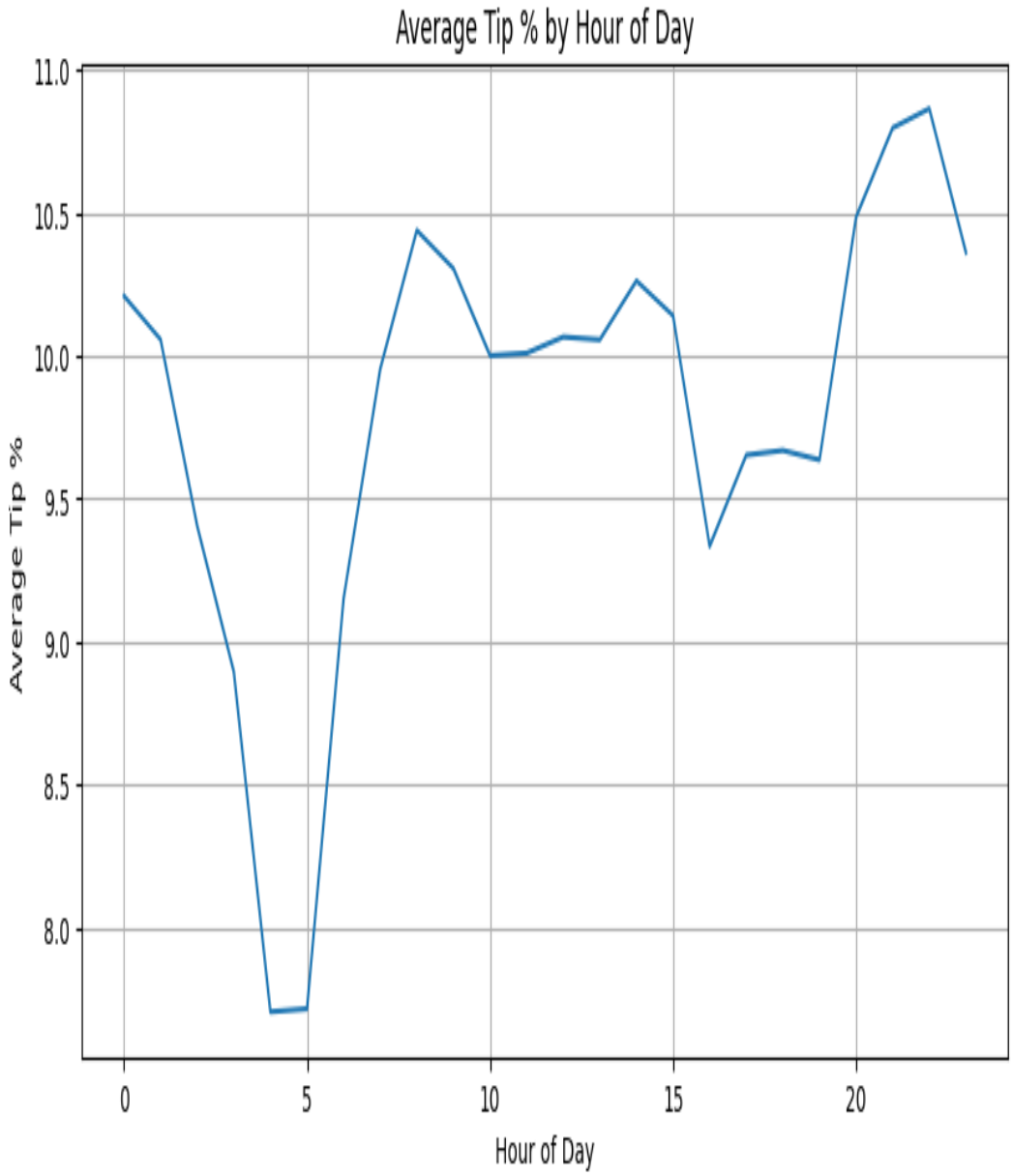

Fig 3.6.2 — Average Tip % by Hour of Day

Result	Tip percentages are relatively stable across hours with slight elevation in late night (11 PM – 3 AM).
Insight	Late-night passengers may be returning from social events with a more generous disposition. Morning commuters tend to be focused and utilitarian in tipping behaviour.
Outcome	Encourage drivers to provide additional comfort (preferred music, smooth driving) during late-night shifts where tip premium is higher.

3.6.3 — Low vs High Tip Trip Comparison

Visualisation: KDE plots | Analysis type: Behavioural Segmentation

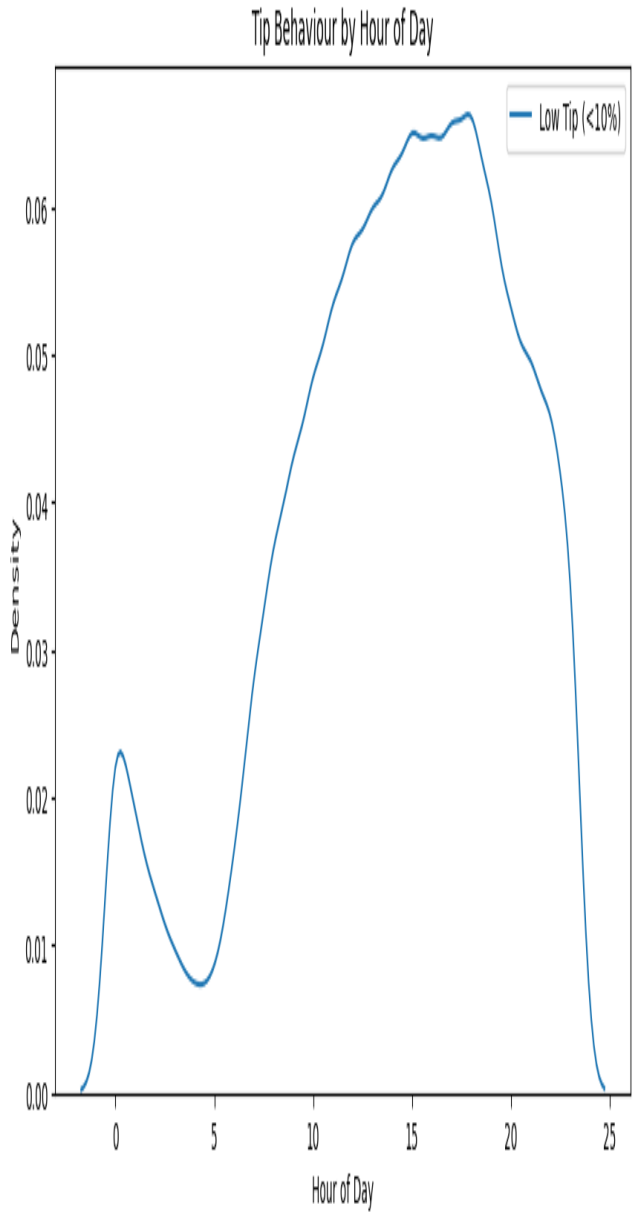

Fig 3.6.3a — Hour Distribution: Low vs High Tip

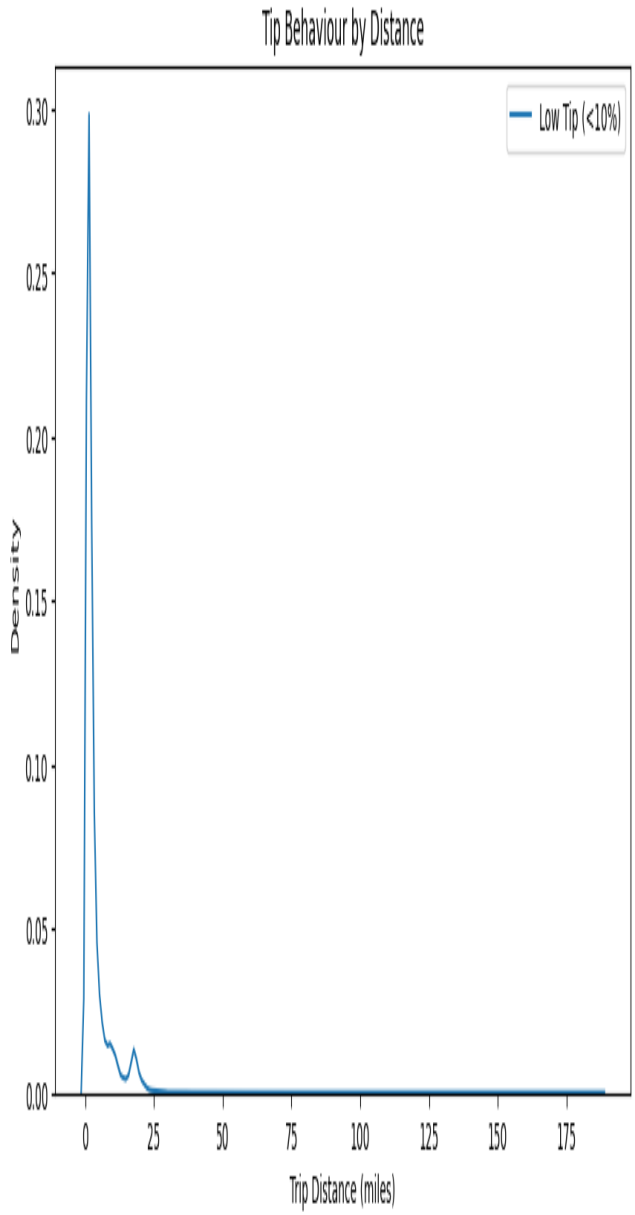

Fig 3.6.3b — Distance Distribution: Low vs High Tip

Result	High-tip trips (>25%) concentrate at lower distances but longer times. Low-tip trips (<10%) are more evenly spread across hours and show shorter trip distances.
Insight	High tippers are not necessarily taking the longest trips — service quality and driver interaction on short-to-medium trips appear to drive above-average tipping.
Outcome	Service quality training and driver communication protocols for short-to-medium trips could significantly lift average tip rates across the fleet.

3.6.4 — Passenger Count by Hour and Day of Week

Visualisation: Line + Bar charts | Analysis type: Occupancy Analysis

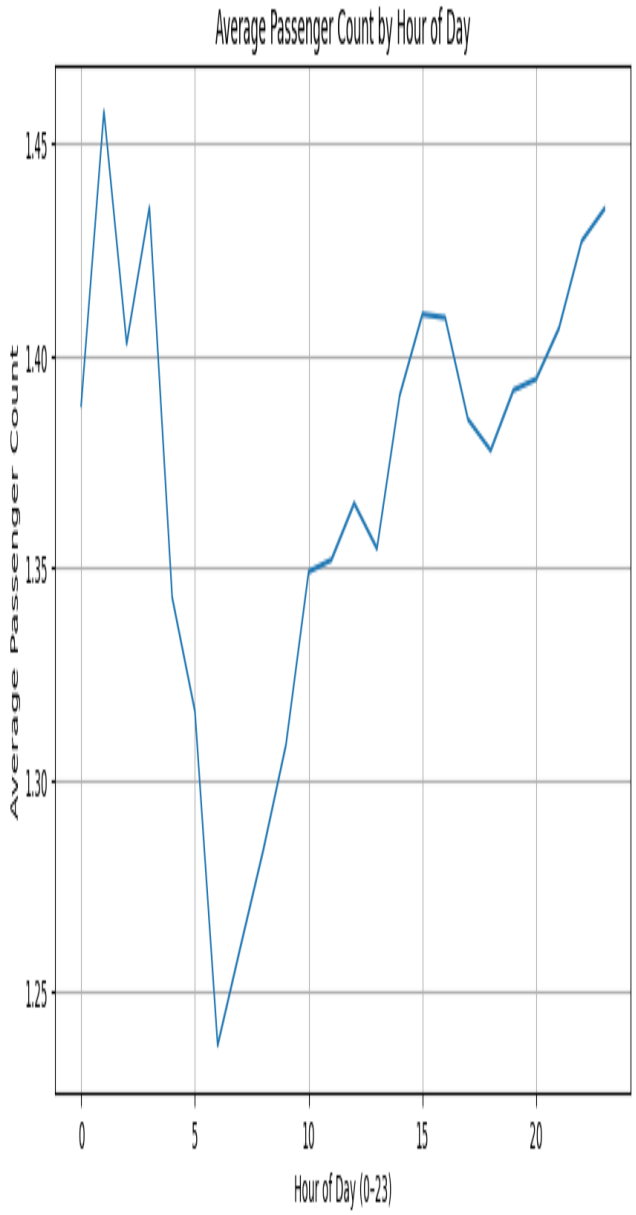

Fig 3.6.4a — Avg Passenger Count by Hour

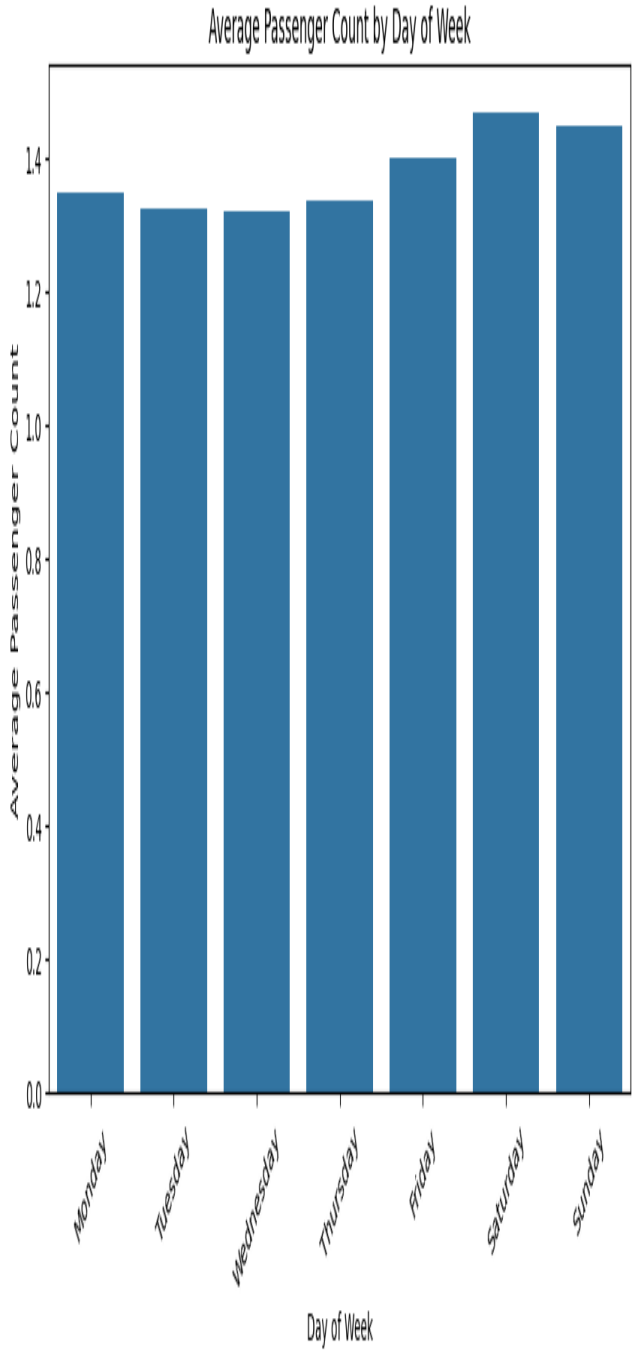

Fig 3.6.4b — Avg Passenger Count by Day

Result	Average passenger count is slightly higher in late evening and early morning hours. Weekend days show marginally higher average counts than weekdays.
Insight	Late-night and weekend trips more often involve groups (social outings, events). Weekday trips are primarily solo commuters.
Outcome	Market group ride packages specifically for weekend evenings. Use vehicle selection (larger capacity cabs) to meet weekend night demand patterns.

3.6.5 — Passenger Count by Zone (Top Zones)

Visualisation: Horizontal bar chart | Analysis type: Spatial Occupancy

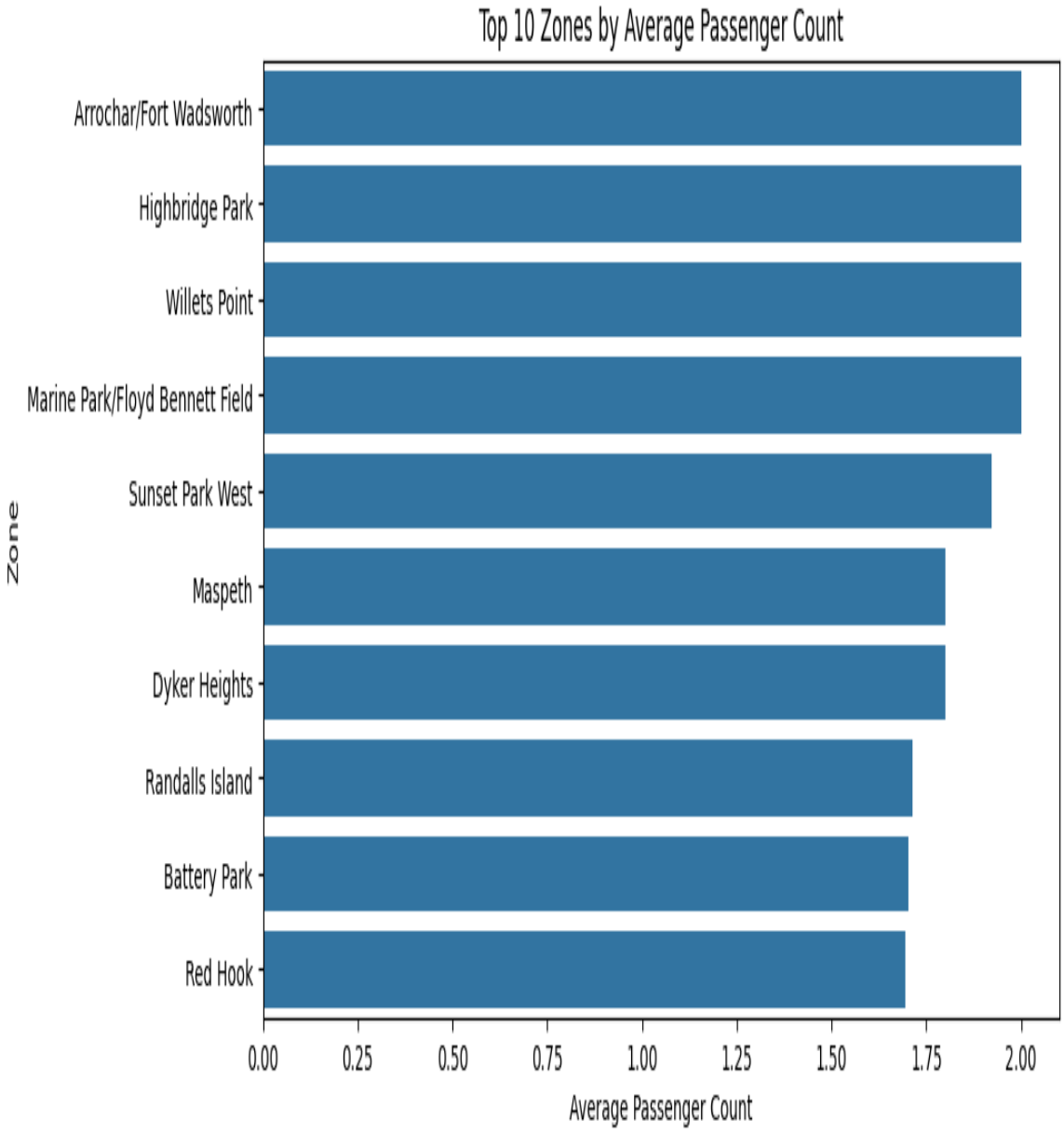

Fig 3.6.5 — Average Passenger Count per Trip by Zone (Top Zones)

Result	Airport zones and entertainment districts show the highest average passenger counts. Business/commuter zones average closer to 1.0 passengers per trip.
Insight	Airport trips naturally attract family groups and business travellers with colleagues. Entertainment zones serve friend groups. These contrast with solo commuter trips.
Outcome	Promote XL capacity cabs in airport queues and entertainment zones. Standard cabs optimised for single passengers should focus on business district routes.

3.6.6 — Surcharge Frequency by Hour

Visualisation: Line chart | Analysis type: Charge Prevalence

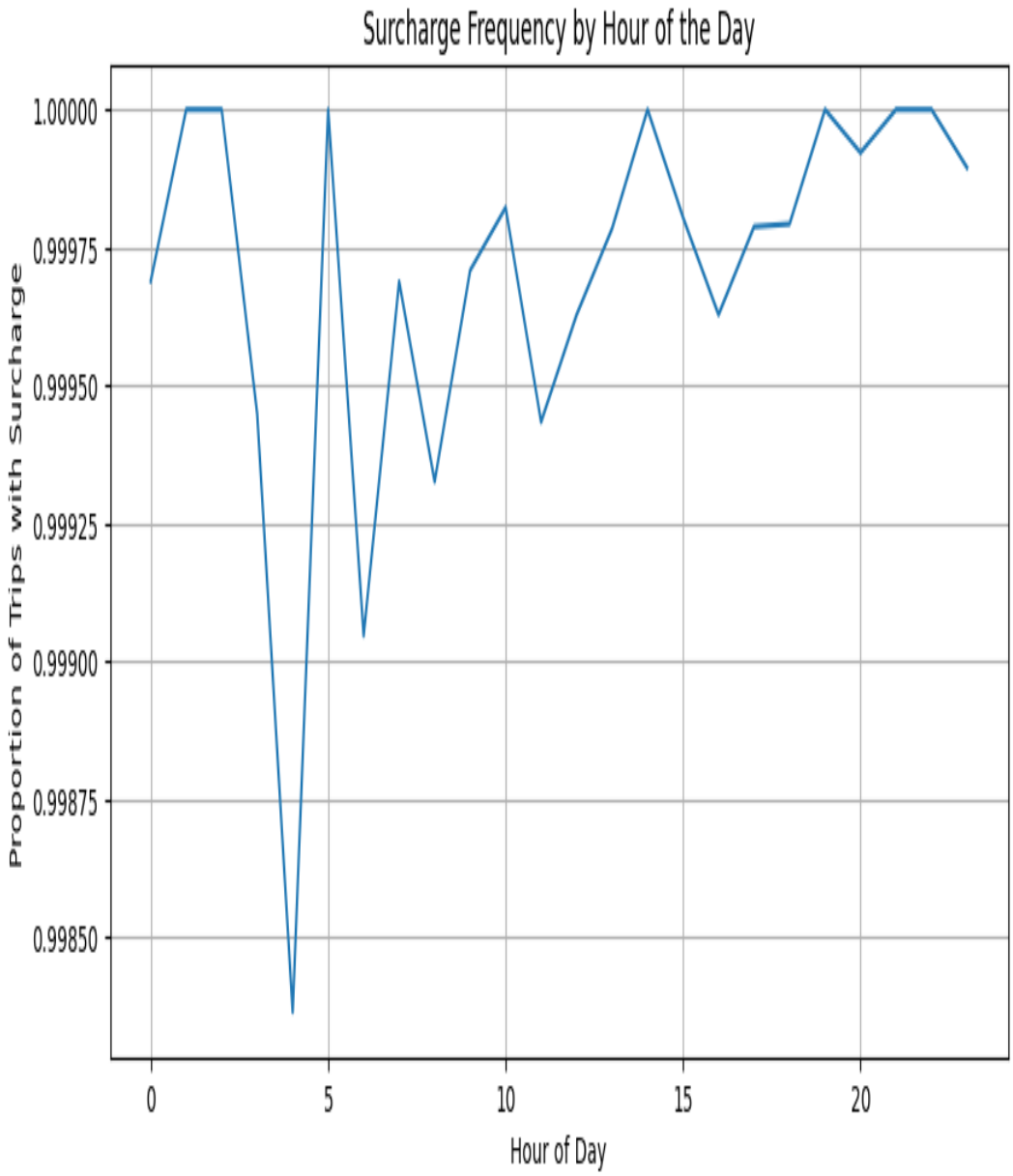

Fig 3.6.6 — Proportion of Trips with Any Surcharge by Hour of Day

Result	Surcharge prevalence is near 100% throughout the day — virtually every trip incurs at least one surcharge (MTA tax, improvement surcharge, or congestion surcharge).
Insight	Standard MTA and improvement surcharges are applied to all trips. Congestion surcharge kicks in for Manhattan trips below 96th Street. Their ubiquity means they are priced-in to passenger expectations.
Outcome	Communicate surcharge transparency clearly in apps and receipts. Passengers who understand mandatory surcharges vs discretionary charges have higher satisfaction and fewer disputes.

SECTION 4

Conclusions & Strategic Recommendations

Key Findings Summary

Dimension	Key Finding	Business Signal
Temporal	Peak demand: 3–7 PM daily; Friday weekly; May/Oct monthly	Time-index fleet deployment and surge pricing
Financial	Distance strongest fare predictor (r=0.87); tip correlates with distance (r=0.61)	Incentivise long-distance trips; train drivers on service quality
Geographical	Midtown Manhattan dominates pickups; airports are high-value zones	Zone-specific deployment schedules and pricing zones
Operational	Night hours (11PM–5AM) = 17% revenue but higher per-trip value	Maintain night fleet near entertainment zones and airports
Pricing	Short trips most expensive per mile; both vendors follow same tier pattern	Short-trip flat rates and long-distance incentive packages
Customer	Group rides tip more; late-night passengers more generous	Service quality focus on 2–4 passenger and late-night trips
Surcharges	Near-universal surcharge application across all hours	Transparent pricing communication to reduce disputes

4.1 — Routing & Dispatching Optimisation

• **Peak-hour concentration:** Deploy maximum fleet 6–9 AM and 3–7 PM on weekdays. Adjust weekend schedules for later-starting demand.

• **Zone-based routing:** Pre-position cabs near Penn Station, Grand Central, and Midtown at 8 AM. Rotate to airport corridors at 4 PM.

• **Night operations:** Maintain reduced fleet near entertainment districts and JFK/LGA from 10 PM–3 AM.

• **Slow route avoidance:** Use speed-per-route analysis to reroute drivers away from consistently congested zone pairs during peak hours.

• **Demand forecasting:** Use historical hourly and monthly patterns to pre-schedule driver shifts 2–4 weeks ahead.

4.2 — Strategic Cab Positioning Across Zones

• **Midtown Manhattan priority:** The top 10 pickup zones are all in central Manhattan — full fleet presence essential during business hours.

• **Airport zones:** JFK, LGA, and EWR zones show high average trip values. Dedicated airport queuing with driver incentives recommended.

• **Entertainment zones:** Position 20–30% of night fleet near nightlife clusters (lower Manhattan, Hell's Kitchen) from 9 PM onwards.

• **Outer borough growth:** Low pickup/dropoff ratios in outer boroughs signal underserved demand. Test targeted promotions in Brooklyn and Queens.

• **Residential dropoffs:** Night dropoff zones are residential — ensure cabs can easily return to active pickup areas after night deliveries.

4.3 — Data-Driven Pricing Strategy

- **Dynamic surge pricing:** Implement 1.2–1.5x multipliers during peak hours (3–7 PM weekdays, weekend nights) to balance supply and demand.
- **Short-trip flat rates:** Introduce fixed-price options for high-frequency short routes (e.g., Penn Station to Midtown hotel corridors).
- **Group ride discount:** 3–5 passenger group discounts of 10–15% per person improve competitiveness vs ride-hailing apps.
- **Long-distance incentive:** Airport and >10 mile trips should offer fixed competitive rates to attract high-value journeys.
- **Vendor price alignment:** Align fare structures across vendors for the same route/time combinations to avoid customer confusion and comparison shopping.

Final Statement

This analysis of 2023 NYC Yellow Taxi data reveals that **temporal concentration, geographic clustering, and pricing transparency** are the three most actionable levers for operational improvement. The single most impactful intervention is **time-indexed fleet deployment** — matching driver supply precisely to the demand patterns identified across hourly, daily, and monthly dimensions. Combined with zone-specific positioning and dynamic pricing, these strategies can improve both revenue per trip and driver utilisation rates without requiring significant capital investment.